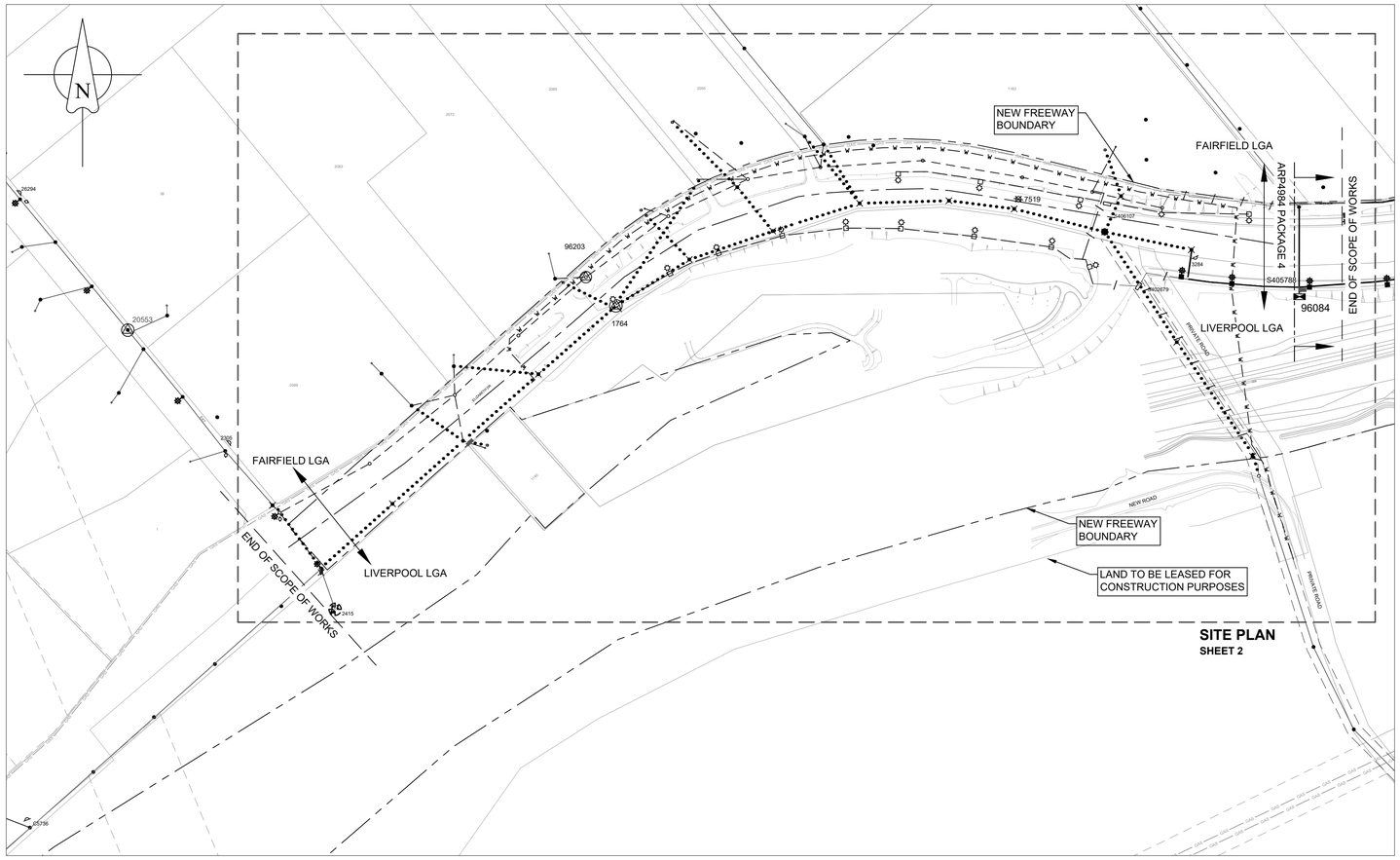


## SITE PLAN
SHEET 2

## LOCATION PLAN

0 40 80 120 160 200m
40302010
SCALE 1:2000 @ A1

| | |
|---|---|
| HV TRENCH LENGTH | : 395m |
| LV TRENCH LENGTH | : 591m |
| TOTAL TRENCH LENGTH: 986m | |

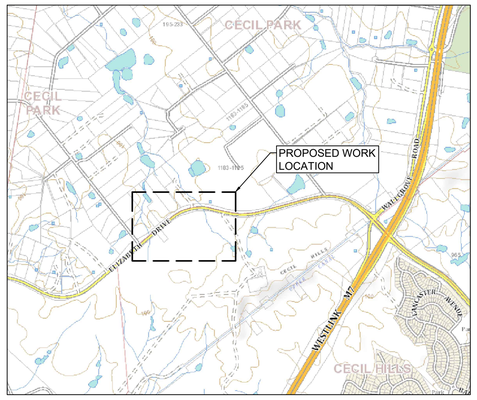


## LOCATION MAP
(NTS)

### CAUTION :

HIGH PRESSURE GAS MAINS IN VICINITY OF PROPOSED WORK AREA. PRIOR TO ANY EXCAVATION IN THIS AREA MUST CONTACT TO HIGH PRESSURE RESPONSE COORDINATOR ON **1300 665 380**

### KEY DOCUMENTS TABLE

THE CERTIFICATION OF THIS PROJECT IS SUPPORTED BY THE FOLLOWING KEY DOCUMENTS

| DOCUMENT NAME | NOTATION DATE |
|---|---|
| SUMMARY ENVIRONMENTAL REPORT (SER) | 15/12/2023 |
| AGREEMENT FOR ENTRY, GRANT and CREATION OF EASEMENT - FPJ5013 | N/A |
| EQUIPMENT TO BE RETURNED TO ENDEAVOUR ENERGY - FPJ4252 | 15/12/2023 |
| EQUIPMENT TO BE RETURNED TO ENDEAVOUR ENERGY - FPJ4253 | N/A |
| TELECOMMUNICATION ASSET AGREEMENT - FPJ4184 | 28/03/2023 |
| DESIGNER'S SAFETY REPORT | 15/12/2023 |
| LIST ANY KEY DOCUMENTS SUPPORTING THE CERTIFICATION: | |
| 1. M12 EIS APPENDIX I ABORIGINAL CULTURAL HERITAGE ASSESSMENT REPORT | October 2019 |
| 2. APPROVED DISPENSATION FORM 0048 FOR INSTALLING 17M POLE | 7/07/2023 |
| 3. TfNSW SKETCH SR 5334 FILE NO. : SF'2019/158153 | 20/11/2020 |
| 4. TfNSW LETTER FOR CONFIRMATION OF ACCESS TO EE ASSETS | 12/02/2024 |

**NOTE:**
- THIS PROJECT ASSUMES COMPLETION OF ARP4984.
- ASP LEVEL 2 WORK WILL BE CARRIED AS PER NSW INSTALLATION RULE AND SHOWN FOR INFORMATION ONLY AND NOT PART OF THIS CERTIFICATION
- ASP LEVEL 1 / CONTRACTOR TO MAINTAIN MINIMUM EXISTING STREET LIGHT LUX LEVEL DURING CONSTRUCTION
- AN ABORIGINAL HERITAGE IMPACT PERMIT (AHIP) HAS BEEN OBTAINED BY THE DEVELOPER OF THE ROAD (AHIP). THE ASP LEVEL 1 HAS THE RESPONSIBILITY OF LIAISING WITH THE DEVELOPER TO ENSURE THAT THE CONDITIONS OF THE AHIP ARE ADHERED TO AT ALL TIMES.

### PIONEER COST SHARE REIMBURSEMENT SCHEME
Pre-Calculated Reimbursement for Customers Load up to 50kVA

| Asset | Asset Cost Estimate ($) | Unit Quantity | Prospective New Customer Numbers | Maximum Reimbursement per New Customer Connected ($) | Maximum Reimbursement Amount ($) |
|---|---|---|---|---|---|
| HV Mains | | | | | N/A |
| LV Mains | | | | | N/A |
| Substation | | | | | N/A |

### THIS DRAWING SUPPLIES PROPOSED M12 ROAD UPGRADE

| C.A.P. NO | FILE NO | LOT NO | NO OF LOT | DEVELOPER | DEVELOPERS REP | PHONE NO |
|---|---|---|---|---|---|---|
| ARP4983 | | N/A | N/A | TfNSW | JAMES JOHN | M : 0438626359 |

NOTE:
- THIS PROJECT ASSUMES THE COMPLETION OF ARP4984.

## NOTES

1. THIS DRAWING IS TO BE READ IN CONJUNCTION WITH RELEVANT ENDEAVOUR ENERGY'S STANDARDS AND THE NETWORK CONNECTION POLICY.
2. ENDEAVOUR ENERGY CONTACT PHONE: 131081
3. CERTIFICATION SHALL LAPSE WHERE:
(i) NOTICE OF INTENT HAS NOT BEEN RECEIVED WITHIN SIX (6) MONTHS OF THIS CERTIFICATION, OR
(ii) CONSTRUCTION HAS BEEN INTERRUPTED FOR MORE THAN SIX (6) MONTHS.
WHERE DESIGN CERTIFICATION HAS LAPSED THE DESIGN MUST BE RESUBMITTED FOR CERTIFICATION BY THE ACCREDITED DESIGNER.
4. ATTENTION:
PERMANENT SURVEY MARKS MAY EXIST IN THIS AREA. THESE ARE TO BE LOCATED BY A SURVEYOR PRIOR TO COMMENCEMENT OF WORK.
5. ATTENTION:
ALL SERVICES SEARCHES MUST BE CHECKED BEFORE CONSTRUCTION.
6. WARNING
LIVE ENDEAVOUR ENERGY CABLES & OTHER SERVICES IN THIS AREA. PLEASE CONTACT DIAL BEFORE YOU DIG ON TELEPHONE: 1100 FOR SEARCHES TWO DAYS PRIOR TO EXCAVATION.
7. ATTENTION:
SERVICE PROVIDER TO NOTIFY ENDEAVOUR ENERGY'S ASSET DATA CUSTOMER DEPT. DAILY WHEN CABLE WORKS IS IN PROGRESS. TELEPHONE 131081.
8. OPERATION LIMITATIONS
UNLESS APPROVED OTHERWISE, INTERRUPTION TO ANY CUSTOMER'S SUPPLY MUST BE AVOIDED. THE FOLLOWING ALTERNATIVES SHOULD BE CONSIDERED:
-MOBILE GENERATORS & SUBSTATIONS
-LIVE LINE WORK
-DESIGN ALTERNATIVES
-LOW VOLTAGE PARALLELS
-WORK PRACTICES/STANDARDS
THE COST IS TO BE FUNDED BY THE CUSTOMER/DEVELOPER
9. REIMBURSEMENTS WILL BE PAID TO THE NOMINATED PARTY ON THE LETTER OF INTENT AFTER THE WORKS HAVE BEEN COMPETED AND THE LETTER OF ACCEPTANCE HAS BEEN ISSUED. THE REIMBURSED AMOUNT IS SHOWN IN THE FUNDING ARRANGEMENTS FOR SCOPE OF WORK. ANY DISAGREEMENT WITH THE AMOUNT SHOULD BE RESOLVED WITH ENDEAVOUR ENERGY PRIOR TO THE COMMENCEMENT OF WORKS.
10. AN EARTH CONNECTION WARNING LABEL MUST BE INSTALLED WHERE EARTH CONDUCTOR OR AN EXTENDED EARTH GRID IS TO BE CONNECTED TO LV STREET NEUTRAL TO ACHIEVE AN MEN SYSTEM AS PER EDI 0006. REFER TO DRAWING No.348245.
11. HAVE ALL THE EXISTING ASSETS BEEN FIELD CHECKED AND ARE ACCURATE AT THE TIME OF DESIGN? YES / ~~NO~~
12. QUANTITIES AND DIMENSIONS GIVEN ON THIS DRAWING ARE BASED ON DESIGN INFORMATION AND SITE CONDITIONS AT THE TIME OF DESIGN. AS THEY MIGHT CHANGE, THE BUILDER OF THIS PROJECT MUST CHECK ALL QUANTITIES AND DIMENSION ON SITE PRIOR TO TENDERING AND PRIOR TO CONSTRUCTION.
13. ENVIRONMENTAL MANAGEMENT STANDARD EMS001 IS PART OF THE DESIGN.

### FUNDING ARRANGEMENTS FOR SCOPE OF WORKS

| ASP LEVEL 1 ELECTRICAL WORKS | | CUSTOMER |
|---|---|---|
| ENDEAVOUR ENERGY SUPPLIED MATERIALS | CUSTOMER FUNDED NON-CONTESTABLE WORKS | CUSTOMER FUNDED |
| - Nil | - Network switching, substation commissioning, contract inspection and ancillary fees. | Includes but not limited to:<br>- Pegging of property boundaries & infrastructure locations<br>- Providing site access<br>- Own service & service connection<br>- Confirm finished ground levels |
| ENDEAVOUR ENERGY FUNDED & CONSTRUCTED<br>Works Required Prior to Completion of Customer Contestable Project: - Nil<br>Works Required in Association of Customer Contestable Project: - Nil | | EXISTING DUCT USAGE CHARGES (exc GST): Nil |
| ENDEAVOUR ENERGY FUNDED & ASP L1 CONSTRUCTED – REIMBURSEMENT (exc GST)<br>Pole Sub - 200kVA Pole Transformer $5,675<br>Total EE Capital Contribution (excluding PM & Design) $5,675<br>EE Capital Contribution (HV reimbursed) $6,225 | CUSTOMER FUNDED CONTESTABLE WORKS<br>All other works and materials including but not limited to:<br>- Trenching<br>- Underbores<br>- Duct Installation<br>- Cable laying and/or installations | CO-ORDINATION SUPPLY REQUIRED DATE<br>(TO BE CONFIRMED BY THE CUSTOMER)<br>Third Quarter of 2023<br>ASSET TO BE RETURNED TO NEAREST ENDEAVOUR ENERGY DEPOT BY L1 ASP<br>- 1 x 11kV 100kVA Pole Top Trf - HD CU 7/2.00 LV CABLE (APPROX. 360m) ALL REMOVED COPPER CONDUCTORS ARE TO BE RETURNED TO EE DEPOT. |

### ATTENTION
ALL SERVICES SEARCHES MUST BE CHECKED BEFORE CONSTRUCTION.

BEFORE YOU DIG
www.byda.com.au

### COMMUNICATION ASSETS ALTERATION/RELOCATION

Telecommunication Assets are / ~~are not~~ affected by this project.
The construction ASP must coordinate the work with the following Telecommunication Companies:

| Comms Co. | Contact Name | Phone No. | Initial Contact Date | Arrangement Details and Date Agreed |
|---|---|---|---|---|
| NBN | Kenny D'Cruz | 289188319 | '23-Dec-2022 | 60 working days notice / 28/03/2023 |

Technical details of the arrangements are available from the Design ASP.

### CERTIFIED BY ENDEAVOUR ENERGY

Amendment: D
Date Approved: 12-11-2024
Examiner's Signature: Ali Siddiqui
Print Name: Ali Siddiqui

This Certification is issued subject to Endeavour Energy's Standard Certification Terms

### AUTHORISATION OF ESTIMATE VALUE OF ENDEAVOUR ENERGY FUNDED ASSETS FOR ARP4983

Signed: Ali Siddiqui
Print Name: Ali Siddiqui
Service Number: 39231
Funding Amount: $6,225
Date: 12-11-2024

### DESIGN COMPLIANCE AND INDEMNITY

This design complies with Endeavour Energy's relevant standards as current at this time and as listed on the Endeavour Energy Accredited Service Provider'sInternet site. These standards include, but are not limited to:

CP: Connection Policy
EMS: Environmental Management Standard
MCI: Mains Construction Instruction
MDI: Mains Design Instruction
PDI: Protection Design Instruction
SDI: Substation Design Instruction
SAD 0001: Design Drawing Standard
MMI: Mains Maintenance Instruction
SMI: Substation Maintenance Instruction
LDI 0001: Public lighting Electrical Design Element

Additionally, where relevant, the design complies with AS/NZS 7000 "Overhead Line Design - Detailed Procedures" published by The Australian Standards.

WSP Australia Pty Ltd indemnifies Endeavour Energy for any loss or damage resulting from non-compliance of the design with the above standards.

Signed:
Name: Darshan Shrestha
Service Provider Number: 5045 Date: 6/09/2024

### WORKS COMPLETED/FIELD BOOK

CONSTRUCTED BY:
WORKS COMPLETED:
SIGNATURE: DATE:
INSPECTED BY:
SIGNATURE: DATE:

### ASSET RECORDING

I:
OF:
CONTACT No.:
HEREBY CERTIFY THAT ASSETS MARKED AS-BUILT ON THIS DRAWING HAVE BEEN RECORDED AS PER ENDEAVOR ENERGY STANDARD SAD 0004.
SIGNATURE:
DATE:

Cadastre: © Land and Property Information 2016

| AMENDMENTS | | | |
|---|---|---|---|
| A | ORIGINAL ISSUE | DRAFT No. 05 | 11/03/2024 |
| B | CHK'D | P. P. | |
| | DRWN | D. S. | |
| | MOVE POLE / PILLAR LOCATION AND REPLACED POLE | | 9/08/2024 |
| C | CHK'D | P. P. | |
| | DRWN | D. S. | |
| | MOVE POLE REF '61' & ESTABLISH STJ AT REF '60' | | 4/11/2024 |
| D | CHK'D | P. P. | |
| | DRWN | D. S. | |
| | UPRATE POLE SUB AT REF 28 & REVISED EARTHING REF 61 | | |

CLIENT: JOHN HOLLAND M7→M12 Integration Project; NSW GOVERNMENT Transport for NSW

wsp
Level 27, Ernst & Young Centre
680 George Street
Sydney NSW 2000
GPO BOX 5394
Sydney NSW 2001 Australia
Telephone +61 2 9272 5100
Facsimile +61 2 9272 5101
Email: sydney@wsp.com
ASP REF/ACCREDIATION NO. - 5045

TEMPLATE VERSION No.5.20

© THIS DRAWING AND THE COPYRIGHT THEREIN IS THE PROPERTY OF ENDEAVOUR ENERGY AND MAY NOT BE COPIED, REPRODUCED, DISTRIBUTED, LOANED OR USED WITHOUT THE WRITTEN CONSENT OF ENDEAVOUR ENERGY

| REFERENCE DRAWING'S | |
|---|---|
| ULL1937 | CONNECTION OF LOAD |

| WORK ORDERS | |
|---|---|
| GENERAL | |
| OVERHEAD | |
| UNDERGROUND | |
| SUBSTATIONS | |

| | |
|---|---|
| CAMS File No. | ARP4983 |
| AM PROJ. No. | |
| HV SWITCHING | 3284 |
| EE DEPOT | HOXTON PARK |
| EE REGION | CENTRAL |
| HV OP DIAG | KEMPS CREEK 1 D11 |
| LOCAL GOV AREA | LIVERPOOL |

ORIGINAL SCALE

| | |
|---|---|
| DRAWN | DARSHAN S |
| DATE | 17/07/2023 |
| CH'D | PRAMOD P |
| DESIGN | DARSHAN S |

DO NOT SCALE
DIMENSIONS IN METRES
GDA94/MGA56 COORDINATE SYSTEM

ELIZABETH DRIVE
CECIL PARK
ARP4983
ASSET RELOCATION
M12 EAST - ELIZABETH DRIVE CONNECTION

Endeavour Energy

| A1 | 526458 | D |
|---|---|---|

SHEET No 1 OF 9 SHEETS

92119

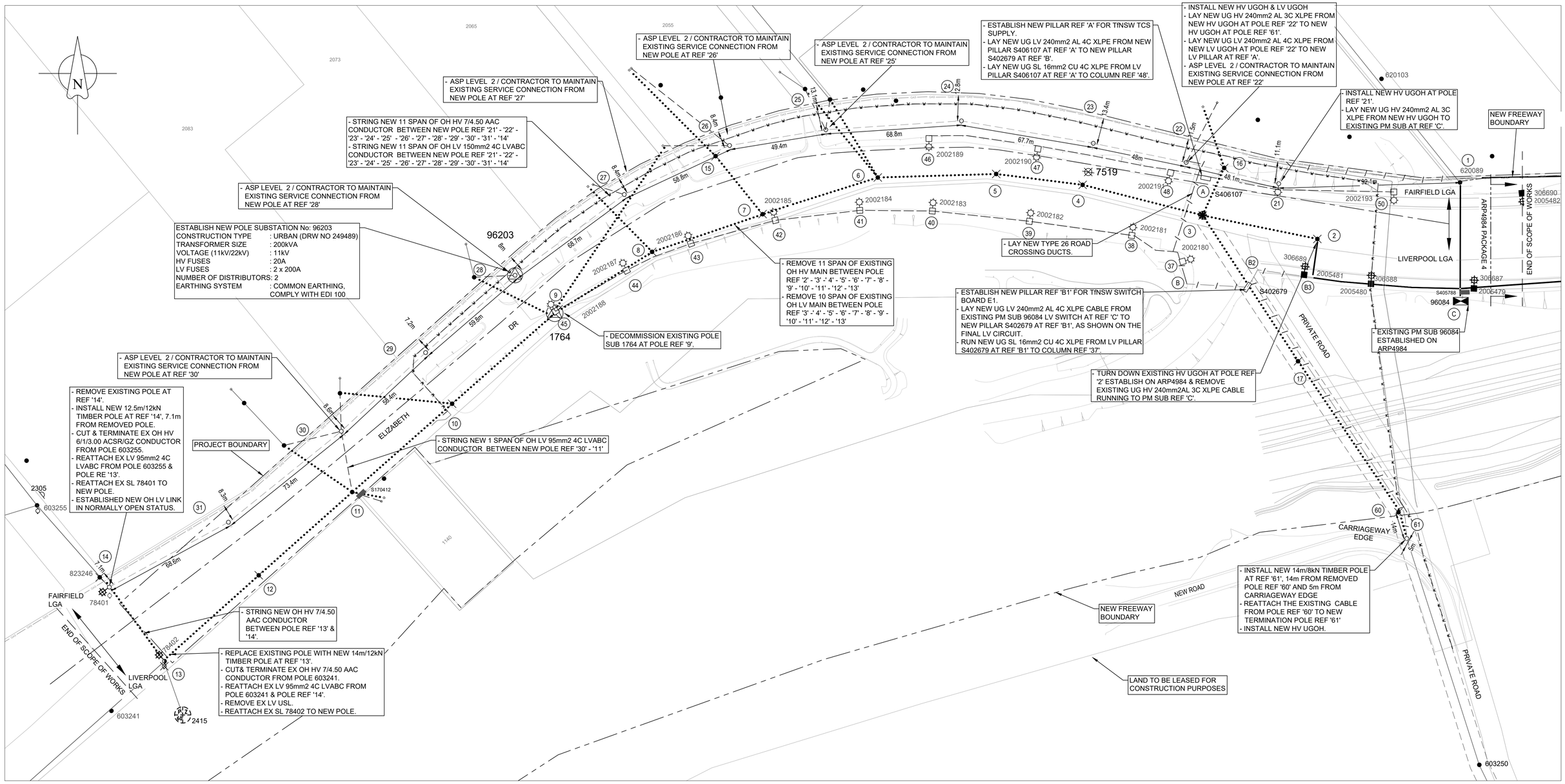


## SITE PLAN LEGEND

- NEW LV TRENCH
- STRING NEW OH CABLE
- EXISTING UNDERGROUND MAINS
- EXISTING OH CABLE
- REMOVE CONDUCTOR
- EXISTING DUCTS
- LGA DEMARCATION
- EXISTING LANTERN
- REMOVE LANTERN
- NEW LANTERN
- EXISTING POLE
- REMOVE POLE
- EXISTING COLUMN
- NEW COLUMN
- EXISTING PILLAR
- PADMOUNT SUBSTATION
- POLE SUBSTATION
- NEW PILLAR
- LV LINK (N/O)
- NEW POLE
- NEW HV TRENCH
- REPLACE POLE
- HV ABS (N/C)
- HV USL (N/C)
- GAS — HIGH PRESSURE GAS
- WATER MAIN
- NEW FREEWAY BOUNDARY
- EXISTING 9.145m WIDTH ENDEAVOUR ENERGY EASEMENT

## SITE PLAN

0 20 40 60 80 100m

201510 5

SCALE 1:1000 @ A1

ASP LEVEL 2 TO RE-ESTABLISH EXISTING SERVICE CONNECTION.

**NOTE:**
- NEW SL LUMINARIES NUMBER ARE NOT SHOWN ON THE DESIGN FOR CLARITY PURPOSE.

ATTENTION
ALL SERVICES SEARCHES MUST BE CHECKED BEFORE CONSTRUCTION.

BEFORE YOU DIG
www.byda.com.au

CERTIFIED BY ENDEAVOUR ENERGY
Amendment: D
Date Approved: 12-11-2024
Examiner's Signature: Ali Siddiqui
Print Name: Ali Siddiqui
This Certification is issued subject to Endeavour Energy's Standard Certification Terms

WORKS COMPLETED/FIELD BOOK
CONSTRUCTED BY:
WORKS COMPLETED:
SIGNATURE: DATE:
INSPECTED BY:
SIGNATURE: DATE:

ASSET RECORDING
I:
OF:
CONTACT No.:
HEREBY CERTIFY THAT ASSETS MARKED AS-BUILT ON THIS DRAWING HAVE BEEN RECORDED AS PER ENDEAVOR ENERGY STANDARD SAD 0004.
SIGNATURE:
DATE:

Cadastre: © Land and Property Information 2016

| AMENDMENTS | | |
|---|---|---|
| A | ORIGINAL ISSUE | |
| | DRAFT No. 05 | |
| B | 11/03/2024 | P. P. |
| CHK'D | | D. S. |
| DRWN | | |
| | MOVE POLE / PILLAR LOCATION AND REPLACED POLE | |
| C | 8/04/2024 | P. P. |
| CHK'D | | D. S. |
| DRWN | | |
| | MOVE POLE REF '61' & ESTABLISH STJ AT REF '60' | |
| D | 4/11/2024 | |
| CHK'D | | P. P. |
| DRWN | | |
| | UPRATE POLE SUB AT REF 28 & REVISED EARTHING REF 61 | |

CLIENT:
JOHN HOLLAND M7–M12 Integration Project
NSW GOVERNMENT Transport for NSW

wsp
Level 27, Ernst & Young Centre
680 George Street
Sydney NSW 2000
GPO BOX 5394
Sydney NSW 2001 Australia
Telephone +61 2 9272 5100
Facsimile +61 2 9272 5101
Email: sydney@wsp.com
ASP REF/ACCREDIATION NO. - 5045

TEMPLATE VERSION No.5.20

© THIS DRAWING AND THE COPYRIGHT THEREIN IS THE PROPERTY OF ENDEAVOUR ENERGY AND MAY NOT BE COPIED, REPRODUCED, DISTRIBUTED, LOANED OR USED WITHOUT THE WRITTEN CONSENT OF ENDEAVOUR ENERGY.

| REFERENCE DRAWING'S | |
|---|---|
| ULL1937 | CONNECTION OF LOAD |

| WORK ORDERS | |
|---|---|
| GENERAL | |
| OVERHEAD | |
| UNDERGROUND | |
| SUBSTATIONS | |

| | |
|---|---|
| CAMS File No. | ARP4983 |
| AM PROJ. No. | |
| HV SWITCHING | 3284 |
| EE DEPOT | HOXTON PARK |
| EE REGION | CENTRAL |
| HV OP DIAG | KEMPS CREEK 1 D11 |
| LOCAL GOV AREA | LIVERPOOL |

ORIGINAL SCALE

| | |
|---|---|
| DRAWN | DARSHAN S |
| DATE | 17/07/2023 |
| CH'D | PRAMOD P |
| DESIGN | DARSHAN S |

DO NOT SCALE
DIMENSIONS IN METRES
GDA94/MGA56 COORDINATE SYSTEM

ELIZABETH DRIVE
CECIL PARK
ARP4983
ASSET RELOCATION
M12 EAST - ELIZABETH DRIVE CONNECTION

Endeavour Energy

A1 | 526458 | D

SHEET No 2 OF 9 SHEETS

92119

| FOR HV UGOH ON POLE REF 22 |
|---|
| JOINT / TERMINATION TYPE:_____ |
| NETWORK ACCESS AUTHORISATION:_____ |
| JOINT / TERMINATION KIT #:_____ |
| JOINT / TERMINATION BATCH #:_____ |
| DATE OF MANUFACTURE:_____ |

| FOR HV UGOH ON POLE REF 21 |
|---|
| JOINT / TERMINATION TYPE:_____ |
| NETWORK ACCESS AUTHORISATION:_____ |
| JOINT / TERMINATION KIT #:_____ |
| JOINT / TERMINATION BATCH #:_____ |
| DATE OF MANUFACTURE:_____ |

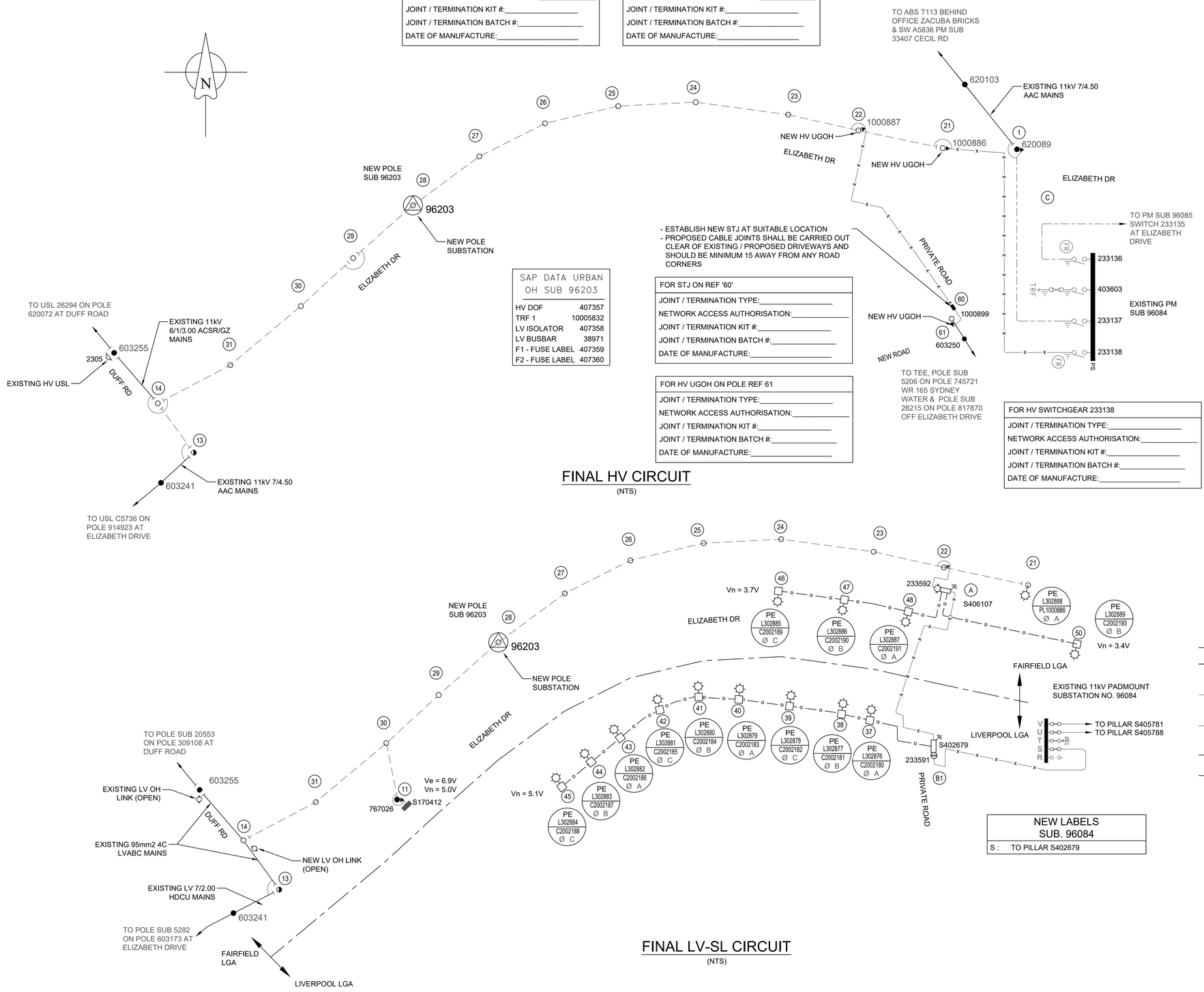


- ESTABLISH NEW STJ AT SUITABLE LOCATION
- PROPOSED CABLE JOINTS SHALL BE CARRIED OUT CLEAR OF EXISTING / PROPOSED DRIVEWAYS AND SHOULD BE MINIMUM 15 AWAY FROM ANY ROAD CORNERS

| SAP DATA URBAN OH SUB 96203 | |
|---|---|
| HV DOF | 407357 |
| TRF 1 | 10005832 |
| LV ISOLATOR | 407358 |
| LV BUSBAR | 38971 |
| F1 - FUSE LABEL | 407359 |
| F2 - FUSE LABEL | 407360 |

| FOR STJ ON REF '60' |
|---|
| JOINT / TERMINATION TYPE:_____ |
| NETWORK ACCESS AUTHORISATION:_____ |
| JOINT / TERMINATION KIT #:_____ |
| JOINT / TERMINATION BATCH #:_____ |
| DATE OF MANUFACTURE:_____ |

| FOR HV UGOH ON POLE REF 61 |
|---|
| JOINT / TERMINATION TYPE:_____ |
| NETWORK ACCESS AUTHORISATION:_____ |
| JOINT / TERMINATION KIT #:_____ |
| JOINT / TERMINATION BATCH #:_____ |
| DATE OF MANUFACTURE:_____ |

| FOR HV SWITCHGEAR 233138 |
|---|
| JOINT / TERMINATION TYPE:_____ |
| NETWORK ACCESS AUTHORISATION:_____ |
| JOINT / TERMINATION KIT #:_____ |
| JOINT / TERMINATION BATCH #:_____ |
| DATE OF MANUFACTURE:_____ |

## FINAL HV CIRCUIT

(NTS)

## HV LEGEND

- EXISTING HV OH CABLE
- LAY 11kV 240sq mm AL 3C XLPE CABLE R.L. 430m C.L. 473m
- STRING 11kV 7/4.50 AAC CABLE AT 7% CBL (MCI0005 SECTION 7 STRINGING TABLE 1) R.L. 2177m C.L. 2394m
- HV USL (N/C)
- POLE SUBSTATION
- HV UGOH
- EXISTING POLE
- NEW POLE
- REPLACE POLE

ASP LEVEL 2 TO RE-ESTABLISH EXISTING SERVICE CONNECTION.

NOTE:
- THIS PROJECT ASSUMES THE COMPLETION OF ARP4984.

ATTENTION
ALL SERVICES SEARCHES MUST BE CHECKED BEFORE CONSTRUCTION.

BEFORE YOU DIG
www.byda.com.au




| NEW LABELS SUB. 96084 |
|---|
| S : TO PILLAR S402679 |

## FINAL LV-SL CIRCUIT

(NTS)

## LV-SL LEGEND

- EXISTING LV OH CABLE
- LAY LV 240sq mm AL 4C XLPE CABLE R.L. 212m C.L. 234m
- STRING 150mm2 4C LVABC CABLE AT 6% CBL (MCI0005 SECTION 7 STRINGING TABLE LV19) R.L. 726m C.L. 799m
- STRING 95mm2 4C LVABC CABLE AT 6% CBL (MCI0005 SECTION 7 STRINGING TABLE LV8) R.L. 36m C.L. 40m
- LAY 16sq mm CU 4C XLPE CABLE R.L. 588m C.L. 647m
- LGA DEMARCATION
- LV LINK (OPEN)
- LV LINK (CLOSE)
- EARTH ELECTRODE
- NEW PILLAR
- EXISTING PILLAR
- EXISTING LANTERN
- NEW COLUMN
- PE Lxxxxx Cxxxxx — NEW LUMINAIRE AND COLUMN NUMBER (WITH PE CELL)
- Vn — VOLTAGE DROP

| CERTIFIED BY ENDEAVOUR ENERGY | |
|---|---|
| Amendment: | D |
| Date Approved: | 12-11-2024 |
| Examiner's Signature: | Ali Siddiqui |
| Print Name: | Ali Siddiqui |

This Certification is issued subject to Endeavour Energy's Standard Certification Terms

| WORKS COMPLETED/FIELD BOOK | |
|---|---|
| CONSTRUCTED BY: | |
| WORKS COMPLETED: | |
| SIGNATURE: | DATE: |
| INSPECTED BY: | |
| SIGNATURE: | DATE: |

ASSET RECORDING

I:

OF:

CONTACT No.:

HEREBY CERTIFY THAT ASSETS MARKED AS-BUILT ON THIS DRAWING HAVE BEEN RECORDED AS PER ENDEAVOR ENERGY STANDARD SAD 0004.

SIGNATURE:

DATE:

Cadastre: © Land and Property Information 2016

| AMENDMENTS | | | | |
|---|---|---|---|---|
| A | ORIGINAL ISSUE | | | |
| | DRAFT No. 05 | | | |
| B | 11/03/2024 | | | |
| | CHK'D | P. P. | | |
| | DRWN | D. S. | | |
| | MOVE POLE / PILLAR LOCATION AND REPLACED POLE | | | |
| C | 8/04/2024 | | | |
| | CHK'D | P. P. | | |
| | DRWN | D. S. | | |
| | MOVE POLE REF 61' & ESTABLISH STJ AT REF 60' | | | |
| D | 4/11/2024 | | | |
| | CHK'D | P. P. | | |
| | DRWN | D. S. | | |
| | UPRATE POLE SUB AT REF 28 & REVISED EARTHING REF 61 | | | |

CLIENT: JOHN HOLLAND M7→M12 Integration Project; NSW GOVERNMENT Transport for NSW

wsp
Level 27, Ernst & Young Centre
680 George Street
Sydney NSW 2000
GPO BOX 5394
Sydney NSW 2001 Australia
Telephone +61 2 9272 5100
Facsimile +61 2 9272 5101
Email: sydney@wsp.com
ASP REF/ACCREDIATION NO. - 5045

TEMPLATE VERSION No.5.20

© THIS DRAWING AND THE COPYRIGHT THEREIN IS THE PROPERTY OF ENDEAVOUR ENERGY AND MAY NOT BE COPIED, REPRODUCED, DISTRIBUTED, LOANED OR USED WITHOUT THE WRITTEN CONSENT OF ENDEAVOUR ENERGY

| REFERENCE DRAWING'S | |
|---|---|
| ULL1937 | CONNECTION OF LOAD |

| WORK ORDERS | |
|---|---|
| GENERAL | |
| OVERHEAD | |
| UNDERGROUND | |
| SUBSTATIONS | |

| | |
|---|---|
| CAMS File No. | ARP4983 |
| AM PROJ. No. | |
| HV SWITCHING | 3284 |
| EE DEPOT | HOXTON PARK |
| EE REGION | CENTRAL |
| HV OP DIAG | KEMPS CREEK 1 D11 |
| LOCAL GOV AREA | LIVERPOOL |

ORIGINAL SCALE

| | |
|---|---|
| DRAWN | DARSHAN S |
| DATE | 17/07/2023 |
| CH'D | PRAMOD P |

DO NOT SCALE
DIMENSIONS IN METRES
GDA94/MGA56 COORDINATE SYSTEM

DESIGN DARSHAN S

ELIZABETH DRIVE
CECIL PARK
ARP4983
ASSET RELOCATION
M12 EAST - ELIZABETH DRIVE CONNECTION

Endeavour Energy

A1 | 526458 | D

SHEET No 3 OF 9 SHEETS

92119

## POLE SUBSTATION 96203 COMMON EARTHING LAYOUT

(NTS)
EARTHING CONSTRUCTION TO EDI-0006
INFORMATION UPDATED AFTER COMMISSIONING ON ____/____/_____
THIS EARTHING DIAGRAM IS A GUIDE ONLY AND SHOWS A MINIMUM REQUIREMENT. ADDITIONAL EARTHING MAY BE REQUIRED TO MEET REQUIRED MAXIMUM EARTH RESISTANCE MEASUREMENTS AS STATED IN ENDEAVOUR ENERGY'S EDI100

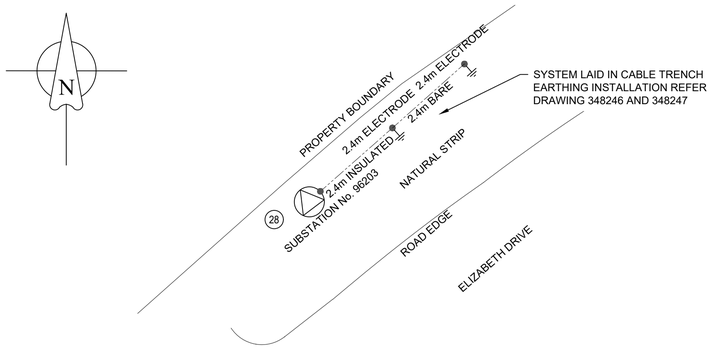


LEGEND
- CABLE CU. ANNEALED 19/2.14 660V PVC/PVC
- CABLE CU. ANNEALED 19/2.14 BARE
- EARTH ELECTRODE LOCATION & LENGTH (LENGTH SHOWN IN METRES)
- POLE SUBSTATION
- POLE

| EARTHING DETAILS POLE SUBSTATION NO 96203 | | | | |
|---|---|---|---|---|
| SOIL RESISTIVITY (ohms m) | LAYER 1 | 16.69 | DEPTH (m) | 1.33 |
| | LAYER 2 | 29.69 | | ∞ |
| DESIGNED EARTH RESISTANCE LIMIT (ohms) | | | | 7.09 |
| MEASURED EARTH RESISTANCE (ohms) | | | | |
| NUMBER OF ELECTRODES | | | | 2 |
| LENGTH OF BARE ELECTRODE (m) | | | | 2.4 |
| CONNECTOR TYPE (CAD or CRIMP) | | | | CRIMP |
| LOCATION CATEGORY : F - FREQUENTED, R-REMOTE, S- SPECIAL | | | | F |
| WHAT DESIGN TOOL USED ? | | | | 3E |
| FAULT LEVEL (kA) | | | | 1.621 |

## HV UGOH POLE 1000887 COMMON EARTHING LAYOUT

(NTS)
EARTHING CONSTRUCTION TO EDI-0006
INFORMATION UPDATED AFTER COMMISSIONING ON ____/____/_____
THIS EARTHING DIAGRAM IS A GUIDE ONLY AND SHOWS A MINIMUM REQUIREMENT. ADDITIONAL EARTHING MAY BE REQUIRED TO MEET REQUIRED MAXIMUM EARTH RESISTANCE MEASUREMENTS AS STATED IN ENDEAVOUR ENERGY'S EDI100

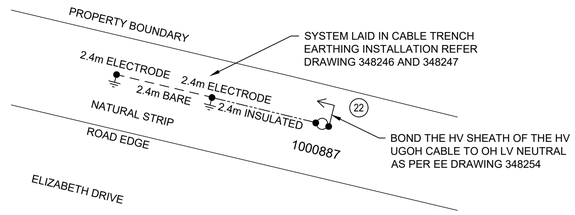


**NOTES**
ESTABLISH AN EARTH BAR AT HV UGOH IN ACCORDANCE WITH ENDEAVOUR ENERGY DRAWING 348254B AT NEW POLE 1000887

| EARTHING DETAILS HV UGOH POLE NO 1000887 | | | | |
|---|---|---|---|---|
| SOIL RESISTIVITY (ohms m) | LAYER 1 | 16.69 | DEPTH (m) | 1.33 |
| | LAYER 2 | 29.69 | | ∞ |
| DESIGNED EARTH RESISTANCE LIMIT (ohms) | | | | 7.09 |
| MEASURED EARTH RESISTANCE (ohms) | | | | |
| NUMBER OF ELECTRODES | | | | 2 |
| LENGTH OF BARE ELECTRODE (m) | | | | 2.4 |
| CONNECTOR TYPE (CAD or CRIMP) | | | | CRIMP |
| LOCATION CATEGORY : F - FREQUENTED, R-REMOTE, S- SPECIAL | | | | F |
| WHAT DESIGN TOOL USED ? | | | | 3E |
| FAULT LEVEL (kA) | | | | 1.621 |

## HV UGOH POLE 1000886 COMMON EARTHING LAYOUT

(NTS)
EARTHING CONSTRUCTION TO EDI-0006
INFORMATION UPDATED AFTER COMMISSIONING ON ____/____/_____
THIS EARTHING DIAGRAM IS A GUIDE ONLY AND SHOWS A MINIMUM REQUIREMENT. ADDITIONAL EARTHING MAY BE REQUIRED TO MEET REQUIRED MAXIMUM EARTH RESISTANCE MEASUREMENTS AS STATED IN ENDEAVOUR ENERGY'S EDI100

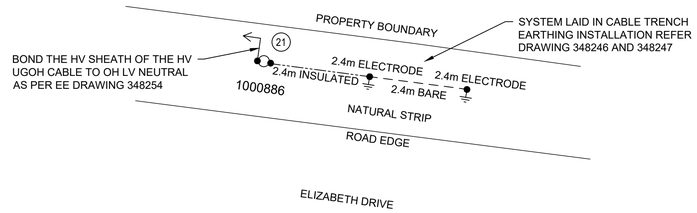


**NOTES**
ESTABLISH AN EARTH BAR AT HV UGOH IN ACCORDANCE WITH ENDEAVOUR ENERGY DRAWING 348254B AT NEW POLE 1000886

| EARTHING DETAILS HV UGOH POLE NO 1000886 | | | | |
|---|---|---|---|---|
| SOIL RESISTIVITY (ohms m) | LAYER 1 | 16.69 | DEPTH (m) | 1.33 |
| | LAYER 2 | 29.69 | | ∞ |
| DESIGNED EARTH RESISTANCE LIMIT (ohms) | | | | 7.09 |
| MEASURED EARTH RESISTANCE (ohms) | | | | |
| NUMBER OF ELECTRODES | | | | 2 |
| LENGTH OF BARE ELECTRODE (m) | | | | 2.4 |
| CONNECTOR TYPE (CAD or CRIMP) | | | | CRIMP |
| LOCATION CATEGORY : F - FREQUENTED, R-REMOTE, S- SPECIAL | | | | F |
| WHAT DESIGN TOOL USED ? | | | | 3E |
| FAULT LEVEL (kA) | | | | 1.621 |

## HV UGOH POLE 1000899 COMMON EARTHING LAYOUT

(NTS)
EARTHING CONSTRUCTION TO EDI-0006
INFORMATION UPDATED AFTER COMMISSIONING ON ____/____/_____
THIS EARTHING DIAGRAM IS A GUIDE ONLY AND SHOWS A MINIMUM REQUIREMENT. ADDITIONAL EARTHING MAY BE REQUIRED TO MEET REQUIRED MAXIMUM EARTH RESISTANCE MEASUREMENTS AS STATED IN ENDEAVOUR ENERGY'S EDI100

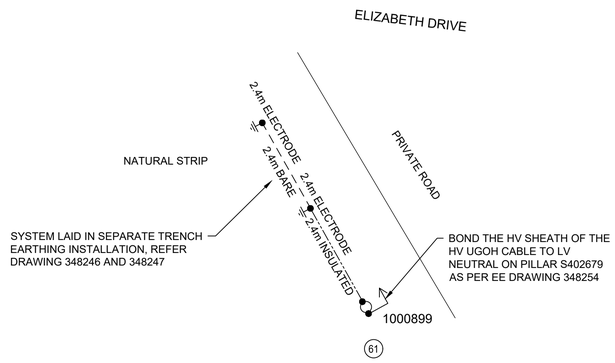


| EARTHING DETAILS HV UGOH POLE NO 1000899 | | | | |
|---|---|---|---|---|
| SOIL RESISTIVITY (ohms m) | LAYER 1 | 16.69 | DEPTH (m) | 1.33 |
| | LAYER 2 | 29.69 | | ∞ |
| DESIGNED EARTH RESISTANCE LIMIT (ohms) | | | | 7.09 |
| MEASURED EARTH RESISTANCE (ohms) | | | | |
| NUMBER OF ELECTRODES | | | | 2 |
| LENGTH OF BARE ELECTRODE (m) | | | | 2.4 |
| CONNECTOR TYPE (CAD or CRIMP) | | | | CRIMP |
| LOCATION CATEGORY : F - FREQUENTED, R-REMOTE, S- SPECIAL | | | | F |
| WHAT DESIGN TOOL USED ? | | | | 3E |
| FAULT LEVEL (kA) | | | | 1.666 |

**ATTENTION**
ALL SERVICES SEARCHES MUST BE CHECKED BEFORE CONSTRUCTION.

BEFORE YOU DIG
www.byda.com.au

**CERTIFIED BY ENDEAVOUR ENERGY**
Amendment: D
Date Approved: 12-11-2024
Examiner's Signature: Ali Siddiqui
Print Name: Ali Siddiqui
This Certification is issued subject to Endeavour Energy's Standard Certification Terms

**WORKS COMPLETED/FIELD BOOK**
CONSTRUCTED BY:
WORKS COMPLETED:
SIGNATURE: DATE:
INSPECTED BY:
SIGNATURE: DATE:

**ASSET RECORDING**
I:
OF:
CONTACT No.:
HEREBY CERTIFY THAT ASSETS MARKED AS-BUILT ON THIS DRAWING HAVE BEEN RECORDED AS PER ENDEAVOR ENERGY STANDARD SAD 0004.
SIGNATURE:
DATE:

Cadastre: © Land and Property Information 2016

| AMENDMENTS | | |
|---|---|---|
| A | ORIGINAL ISSUE | |
| | DRAFT No. 05 | |
| B | 11/03/2024 | |
| | CHK'D | P. P. |
| | DRWN | D. S. |
| | MOVE POLE / PILLAR LOCATION AND REPLACED POLE | |
| C | 9/04/2024 | |
| | CHK'D | P. P. |
| | DRWN | D. S. |
| | MOVE POLE REF '61' & ESTABLISH STJ AT REF '60' | |
| D | 4/11/2024 | |
| | CHK'D | P. P. |
| | DRWN | D. S. |
| | UPRATE POLE SUB AT REF 28 & REVISED EARTHING REF 61 | |

CLIENT: JOHN HOLLAND M7→M12 Integration Project; NSW GOVERNMENT Transport for NSW

wsp
Level 27, Ernst & Young Centre
680 George Street
Sydney NSW 2000
GPO BOX 5394
Sydney NSW 2001 Australia
Telephone +61 2 9272 5100
Facsimile +61 2 9272 5101
Email: sydney@wsp.com
ASP REF/ACCREDIATION NO. - 5045

TEMPLATE VERSION No.5.20

© THIS DRAWING AND THE COPYRIGHT THEREIN IS THE PROPERTY OF ENDEAVOUR ENERGY AND MAY NOT BE COPIED, REPRODUCED, DISTRIBUTED, LOANED OR USED WITHOUT THE WRITTEN CONSENT OF ENDEAVOUR ENERGY

| REFERENCE DRAWING'S | |
|---|---|
| ULL1937 | CONNECTION OF LOAD |

| WORK ORDERS | |
|---|---|
| GENERAL | |
| OVERHEAD | |
| UNDERGROUND | |
| SUBSTATIONS | |

| | |
|---|---|
| CAMS File No. | ARP4983 |
| AM PROJ. No. | |
| HV SWITCHING | 3284 |
| EE DEPOT | HOXTON PARK |
| EE REGION | CENTRAL |
| HV OP DIAG | KEMPS CREEK 1 D11 |
| LOCAL GOV AREA | LIVERPOOL |

ORIGINAL SCALE

| | |
|---|---|
| DRAWN | DARSHAN S |
| DATE | 17/07/2023 |
| CH'D | PRAMOD P |

DO NOT SCALE
DIMENSIONS IN METRES
GDA94/MGA56 COORDINATE SYSTEM
DESIGN DARSHAN S

ELIZABETH DRIVE
CECIL PARK
ARP4983
ASSET RELOCATION
M12 EAST - ELIZABETH DRIVE CONNECTION

Endeavour Energy

A1 | 526458 | D
SHEET No 4 OF 9 SHEETS

92119

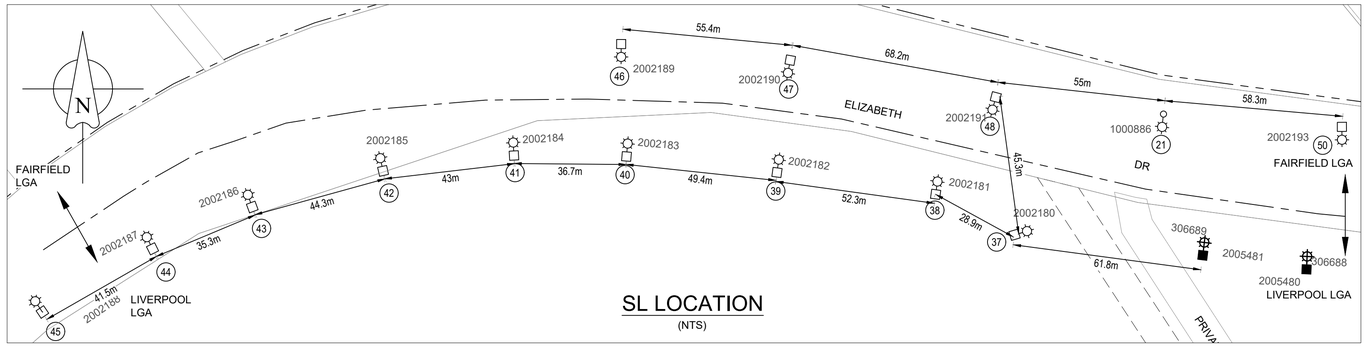


## SL LOCATION
(NTS)

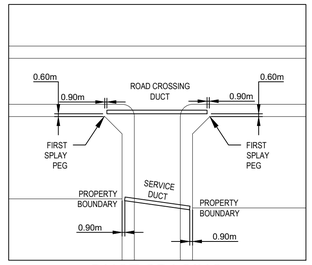


## DUCT SPACING
NTS

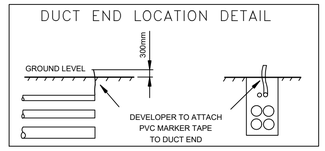


## DUCT DECLARATION

I _____

OF _____

CONTACT NUMBER _____

HEREBY CERTIFY THAT THE DUCTS SHOWN ON THIS DRAWING HAVE BEEN INSTALLED IN ACCORDANCE WITH THIS DRAWING & ENDEAVOR ENERGY STANDARDS MDI0028 & MCI0006. THE DUCT DEPTHS AND LOCATIONS AT EACH END HAVE BEEN CORRECTLY MARKED ON THIS DRAWING AS PER ENDEAVOR ENERGY STANDARD SAD0004.

THE INSTALLATION OF THE DUCTS WAS

COMMENCED ON _____

& COMPLETED ON _____

SIGNATURE _____

LAND SURVEYOR REGISTERED UNDER SURVEYING AND SPATIAL INFORMATION ACT 2002

NOTE:
- THIS PROJECT ASSUMES THE COMPLETION OF ARP4984.

ASP LEVEL 2 TO RE-ESTABLISH EXISTING SERVICE CONNECTION.

**ATTENTION**

ALL SERVICES SEARCHES MUST BE CHECKED BEFORE CONSTRUCTION.

## DUCT BREAKDOWN TABLE

| Route | Configuration | Route Length (m) | Reimbursement (m) x ($) | Existing Duct Usage Charge (m) x ($) |
|---|---|---|---|---|
| 1 - C | (Existing Road Underbore) RMS ROAD, 1500, LV HV | 56 | NIL | NIL |
| 1 - 21, B2-61 | (New Duct) NATURAL STRIP, 750, LV HV | 98 | NIL | NIL |
| C - B3 | (Existing Duct) FOOTPATH, 750, SL LV HV | 81 | NIL | NIL |
| B3 -2 | (Existing Duct) NATURAL STRIP, 750, HV | 20 | NIL | NIL |
| B3 - B2 | (New Duct) FOOTPATH, 750, LV HV | 28 | NIL | NIL |
| B2 - B | (New Road Crossing) COUNCIL ROAD, 750, SL LV HV | 37 | NIL | NIL |
| B - 37 | (New Duct) NATURAL STRIP, 750, SL LV HV | 10 | NIL | NIL |
| 37 - A | (Road Underbore) EXISTING RMS ROAD, 1500, SL LV HV | 42 | NIL | NIL |
| A - 22 | (New Duct) FOOTPATH, 750, LV HV | 16 | NIL | NIL |
| 37-38-39-40-41-42-43-44-45, A-50,A-48, 48-47-46 | (New Duct) FOOTPATH, 600, SL | 591 | NIL | NIL |
| B2-61 | (New Duct) NATURAL STRIP, 750, HV, * Earthing | 164 | NIL | NIL |
| | | 1123 m | NIL | NIL |

DUCT LEGEND

NEW TRENCH | SPARE DUCT | DUCT WITH NEW CABLE | DUCT WITH EXISTING CABLE | REMOVE DUCT | REMOVE CABLE | REMOVE DUCT & CABLE

SPARE DUCT REQUIREMENT
1. IN AREAS WHERE ADDITIONAL DUCTS ARE REQUIRED THE SPARE DUCT IS INCLUDED IN THE PVC DUCT SCHEDULE & THE SECTION SHOWN.
2. SPARE SL DUCTS HAVE BEEN PROVIDED AND RESERVED FOR CLIENTS FUTURE USE.

NOTE
1. DUCT LENGTHS AND ARRANGEMENTS TO BE CONFIRMED ON SITE.
2. ALL TRENCH SECTIONS ARE TO BE READ & VIEWED FROM NODE TO NODE AS NOMINATED.
3. FOR ALL REQUIRED/SHOWN CROSSING DUCT WORK, REFER TO TYPICAL ARRANGEMENT INCLUDED ON THIS PAGE.
* THE EXISTING 125mm SPARE CONDUIT IS USED TO LAY THE EARTHING CABLE DUE TO THE ABSENCE OF SPARE 50MM DUCT. THIS ADJUSTMENT IS REQUIRED FOLLOWING A CHANGE IN THE EARTHING DESIGN REQUESTED BY EE IN DESIGN AMENDMENT D.

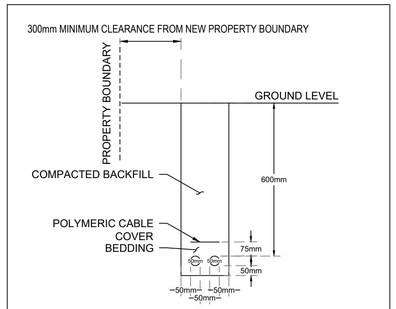


**TYPE 20 DUCT ARRANGEMENT**
**FOOTPATH**
(NTS)

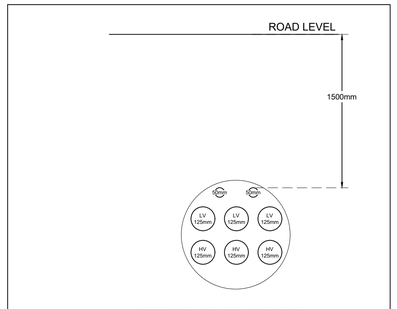


**TYPE 26 DUCT ARRANGEMENT**
**EXISTING RMS ROAD UNDERBORE**
(NTS)

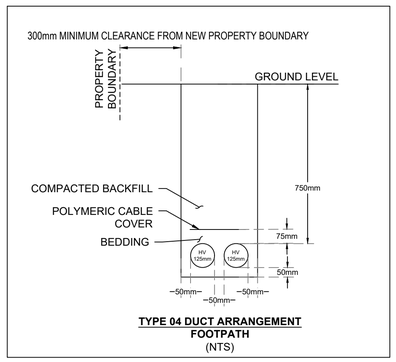


**TYPE 04 DUCT ARRANGEMENT**
**FOOTPATH**
(NTS)

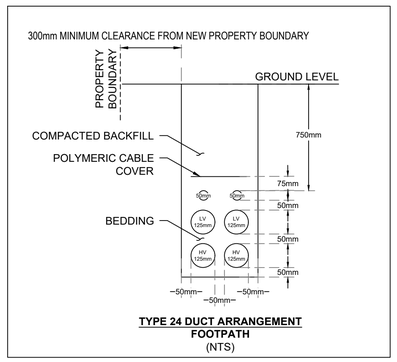


**TYPE 24 DUCT ARRANGEMENT**
**FOOTPATH**
(NTS)

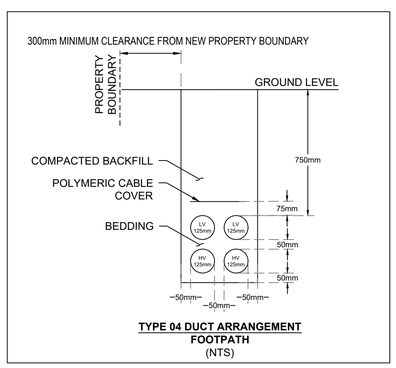


**TYPE 04 DUCT ARRANGEMENT**
**FOOTPATH**
(NTS)

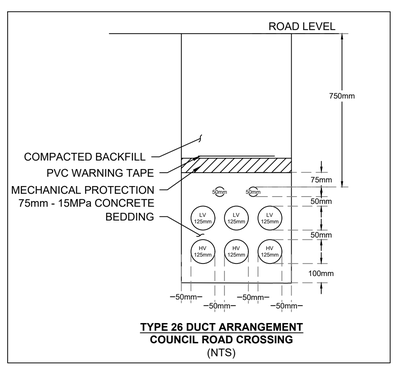


**TYPE 26 DUCT ARRANGEMENT**
**COUNCIL ROAD CROSSING**
(NTS)

BEFORE YOU DIG
www.byda.com.au

**CERTIFIED BY ENDEAVOUR ENERGY**
Amendment: D
Date Approved: 12-11-2024
Examiner's Signature: Ali Siddiqui
Print Name: Ali Siddiqui
This Certification is issued subject to Endeavour Energy's Standard Certification Terms

**WORKS COMPLETED/FIELD BOOK**
CONSTRUCTED BY: _____
WORKS COMPLETED: _____
SIGNATURE: _____ DATE: _____
INSPECTED BY: _____
SIGNATURE: _____ DATE: _____

**ASSET RECORDING**
I: _____
OF: _____
CONTACT No.: _____
HEREBY CERTIFY THAT ASSETS MARKED AS-BUILT ON THIS DRAWING HAVE BEEN RECORDED AS PER ENDEAVOR ENERGY STANDARD SAD 0004.
SIGNATURE: _____
DATE: _____

Cadastre: © Land and Property Information 2016

AMENDMENTS

| | | |
|---|---|---|
| A | ORIGINAL ISSUE | |
| | DRAFT No. 05 | |
| B | 11/03/2024 | P. P. |
| CHK'D | | D. S. |
| DRWN | | D. S. |
| | MOVE POLE / PILLAR LOCATION AND REPLACED POLE | |
| C | 09/08/2024 | P. P. |
| CHK'D | | D. S. |
| DRWN | | D. S. |
| | MOVE POLE REF 61' & ESTABLISH STJ AT REF 60' | |
| D | 4/11/2024 | P. P. |
| CHK'D | | D. S. |
| DRWN | | D. S. |
| | UPRATE POLE SUB AT REF 28 & REVISED EARTHING REF 61 | |

CLIENT: JOHN HOLLAND M7→M12 Integration Project; NSW GOVERNMENT Transport for NSW

wsp
Level 27, Ernst & Young Centre
680 George Street
Sydney NSW 2000
GPO BOX 5394
Sydney NSW 2001 Australia
Telephone +61 2 9272 5100
Facsimile +61 2 9272 5101
Email: sydney@wsp.com
ASP REF/ACCREDIATION NO. - 5045

TEMPLATE VERSION No 5.20

© THIS DRAWING AND THE COPYRIGHT THEREIN IS THE PROPERTY OF ENDEAVOUR ENERGY AND MAY NOT BE COPIED, REPRODUCED, DISTRIBUTED, LOANED OR USED WITHOUT THE WRITTEN CONSENT OF ENDEAVOUR ENERGY

| REFERENCE DRAWING'S | | WORK ORDERS | | | |
|---|---|---|---|---|---|
| ULL1937 | CONNECTION OF LOAD | GENERAL | | CAMS File No. | ARP4983 |
| | | OVERHEAD | | AM PROJ. No. | |
| | | UNDERGROUND | | HV SWITCHING | 3284 |
| | | SUBSTATIONS | | EE DEPOT | HOXTON PARK |
| | | | | EE REGION | CENTRAL |
| | | | | HV OP DIAG | KEMPS CREEK 1 D11 |
| | | | | LOCAL GOV AREA | LIVERPOOL |

ORIGINAL SCALE

| | | |
|---|---|---|
| DRAWN | DARSHAN S | DO NOT SCALE DIMENSIONS IN METRES GDA94/MGA56 COORDINATE SYSTEM |
| DATE | 17/07/2023 | |
| CH'D | PRAMOD P | DESIGN DARSHAN S |

ELIZABETH DRIVE
CECIL PARK
ARP4983
ASSET RELOCATION
M12 EAST - ELIZABETH DRIVE CONNECTION

Endeavour Energy

A1 | 526458 | D

SHEET No 5 OF 9 SHEETS

92119

| FIELD POLE NUMBER | | LANTERNS | | | | | | CONSTRUCTION | | | | | HOLE | | POLE | | | | | | | | |
|---|---|---|---|---|---|---|---|---|---|---|---|---|---|---|---|---|---|---|---|---|---|---|---|
| NEW | EXISTING | NEW | REMOVE | EXISTING | REPLACE | BRACKET | MOUNTING HEIGHT (m) | SPAN LENGTH | LINE DEV DEGREES | HV | LV | SL | DIA mm | DEPTH m | TYPE (m/kN) | STAY | FOOTING | RELOCATE | REPLACE | NEW | EXISTING | REMOVE | DESIGN NUMBER |
| 1000899 | | | | | | | | 120.22 | 0 | B25 + HV UGOH | | | 600 | 2 | 14m/8kN | | C | | | X | | | 61 |
| | 603252 | | | | | | | | | | | | | | | | | | | | | X | 60 |
| 1000896 | | | | | | | | 70.8 | 10.2° | B21 | A01 | | 600 | 1.85 | 12.5m/8kN | | C | | | X | | | 31 |
| 1000895 | | | | | | | | 76.6 | 4.3° | B21 | A01 | | 600 | 1.85 | 12.5m/8kN | | C | | | X | | | 30 |
| 1000894 | | | | | | | | 62.28 | 2.3° | B23 | A01 | | 600 | 1.85 | 12.5m/8kN | | C | | | X | | | 29 |
| 1000893 | | | | | | | | 63.75 | 4.4° | B21+HSUB-F (URBAN) | A05+LSUB | | 750 | 2 | 12.5m/12kN | | C | | | X | | | 28 |
| 1000892 | | | | | | | | 63.72 | 11.5° | B21 | A01 | | 600 | 1.85 | 12.5m/8kN | | C | | | X | | | 27 |
| 1000891 | | | | | | | | 50 | 15.7° | B21 | A01 | | 600 | 1.85 | 12.5m/8kN | | C | | | X | | | 26 |
| 1000890 | | | | | | | | 50 | 5.6° | B21 | A01 | | 600 | 1.85 | 12.5m/8kN | | C | | | X | | | 25 |
| 1000889 | | | | | | | | 69 | 13.4° | B21 | A01 | | 600 | 1.85 | 12.5m/8kN | | C | | | X | | | 24 |
| 1000888 | | | | | | | | 68 | 2.0° | B21 + HV UGOH | A01 | | 600 | 2 | 14m/8kN | | C | | | X | | | 23 |
| 1000887 | | | | | | | | 48 | 1.3° | B21 | A01 | | 600 | 2 | 14m/8kN | | C | | | X | | | 22 |
| 1000886 | | X | | | | EI-B6 | 11 | 48 | | B25 + HV UGOH | A05 | | 900 | 2.3 | 17m/12kN | | C | | | X | | | 21 |
| | 620096 | | | | | | | | | | | | | | | | | | | | | X | 17 |
| | 620087 | | | | | | | | | | | | | | | | | | | | | X | 16 |
| | 620070 | | | | | | | | | | | | | | | | | | | | | X | 15 |
| 1000897 | | | | X | | X | EX | 49 | 4.8° | B23+ B25 | A01 + A05 | | 600 | 2.15 | 12.5m/12kN | | C | | | X | | | 14 |
| | 823246 | | | | | | | | | | | | | | | | | | | | | X | |
| 1000898 | 603240 | | | X | | X | EX | 36 | | B25+ B25 | A05 + B05 | | 600 | 2.3 | 14m/12kN | | C | | X | | | | 13 |
| | 767027 | | | | | | | | | | | | | | | | | | | | | X | 12 |
| | 767026 | | | | | | | EX | EX | REMOVE | REMOVE | | EX | EX | EX 14m/6kN | | EX | | | | X | | 11 |
| | 620081 | | | | | | | | | | | | | | | | | | | | | X | 10 |
| | 745625 | | | | | | | | | | | | | | | | | | | | | X | 9 |
| | 620080 | | | | | | | | | | | | | | | | | | | | | X | 8 |
| | 620101 | | | | | | | | | | | | | | | | | | | | | X | 7 |
| | 620067 | | | | | | | | | | | | | | | | | | | | | X | 6 |
| | 733382 | | | | | | | | | | | | | | | | | | | | | X | 5 |
| | 620066 | | | | | | | | | | | | | | | | | | | | | X | 4 |
| | 745627 | | | | | | | | | | | | | | | | | | | | | X | 3 |
| | 620093 | | | | | | | | | | | | | | | | | | | | | X | 2 |
| | 620089 | | | | | | | EX | EX | EX | | | EX | EX | EX 14m/8kN | | EX | | | | X | | 1 |

LIGHTING EQUIPMENT SCHEDULE

| ITEM ID | STATE | SL NUMBER | SUPPORT NUMBER | LUMINAIRE | | | | COLUMN/POLE | | | | | BRACKET/OUTREACH | | | UPCAST | MOUTING HEIGHT | CATEGORY | CHARGE TO |
|---|---|---|---|---|---|---|---|---|---|---|---|---|---|---|---|---|---|---|---|
| | | | | DESCRIPTION | PART NO. | QTY | RATE CODE | DESCRIPTION | PART NO. | FOOTING (BOLT/FOUNDATION) | QTY | RATE CODE | DESCRIPTION | PART NO. | RATE CODE | | | | |
| | NEW | 302876 | 2002180 | ROADLED 275W AEROSCREEN VISOR | PL99G11L275 | 1 | 774 | 10m RIGID STEEL COLUMN | IE/EB 10.0 | TYPE 3 RAGBOLT / TYPE 3 FOUNDATION | 1 | 996 | 4.5m MAJOR ROAD OUTREACH (32NB) | IE4.5CPS | 991 | 5° | 12m | V | LIVERPOOL COUNCIL |
| | NEW | 302877 | 2002181 | ROADLED 275W AEROSCREEN VISOR | PL99G11L275 | 1 | 774 | 10m RIGID STEEL COLUMN | IE/EB 10.0 | TYPE 3 RAGBOLT / TYPE 3 FOUNDATION | 1 | 996 | 4.5m MAJOR ROAD OUTREACH (32NB) | IE4.5CPS | 991 | 5° | 12m | V | LIVERPOOL COUNCIL |
| | NEW | 302878 | 2002182 | ROADLED MIDI 165W AEROSCREEN VISOR | PM99G15L165 | 1 | 964 | 10m RIGID STEEL COLUMN | IE/EB 10.0 | TYPE 3 RAGBOLT / TYPE 3 FOUNDATION | 1 | 996 | 4.5m MAJOR ROAD OUTREACH (32NB) | IE4.5CPS | 991 | 5° | 12m | V | LIVERPOOL COUNCIL |
| | NEW | 302879 | 2002183 | ROADLED MIDI 165W AEROSCREEN VISOR | PM99G15L165 | 1 | 964 | 10m RIGID STEEL COLUMN | IE/EB 10.0 | TYPE 3 RAGBOLT / TYPE 3 FOUNDATION | 1 | 996 | 4.5m MAJOR ROAD OUTREACH (32NB) | IE4.5CPS | 991 | 5° | 12m | V | LIVERPOOL COUNCIL |
| | NEW | 302880 | 2002184 | ROADLED MIDI 165W AEROSCREEN VISOR | PM99G15L165 | 1 | 964 | 10m RIGID STEEL COLUMN | IE/EB 10.0 | TYPE 3 RAGBOLT / TYPE 3 FOUNDATION | 1 | 996 | 4.5m MAJOR ROAD OUTREACH (32NB) | IE4.5CPS | 991 | 5° | 12m | V | LIVERPOOL COUNCIL |
| | NEW | 302881 | 2002185 | ROADLED MIDI 165W AEROSCREEN VISOR | PM99G15L165 | 1 | 964 | 10m RIGID STEEL COLUMN | IE/EB 10.0 | TYPE 3 RAGBOLT / TYPE 3 FOUNDATION | 1 | 996 | 4.5m MAJOR ROAD OUTREACH (32NB) | IE4.5CPS | 991 | 5° | 12m | V | LIVERPOOL COUNCIL |
| | NEW | 302882 | 2002186 | ROADLED MIDI 165W AEROSCREEN VISOR | PM99G15L165 | 1 | 964 | 10m RIGID STEEL COLUMN | IE/EB 10.0 | TYPE 3 RAGBOLT / TYPE 3 FOUNDATION | 1 | 996 | 4.5m MAJOR ROAD OUTREACH (32NB) | IE4.5CPS | 991 | 5° | 12m | V | LIVERPOOL COUNCIL |
| | NEW | 302883 | 2002187 | ROADLED MIDI 165W AEROSCREEN VISOR | PM99G15L165 | 1 | 964 | 10m RIGID STEEL COLUMN | IE/EB 10.0 | TYPE 3 RAGBOLT / TYPE 3 FOUNDATION | 1 | 996 | 4.5m MAJOR ROAD OUTREACH (32NB) | IE4.5CPS | 991 | 5° | 12m | V | LIVERPOOL COUNCIL |
| | NEW | 302884 | 2002188 | ROADLED MIDI 165W AEROSCREEN VISOR | PM99G15L165 | 1 | 964 | 10m RIGID STEEL COLUMN | IE/EB 10.0 | TYPE 3 RAGBOLT / TYPE 3 FOUNDATION | 1 | 996 | 4.5m MAJOR ROAD OUTREACH (32NB) | IE4.5CPS | 991 | 5° | 12m | V | LIVERPOOL COUNCIL |
| | NEW | 302885 | 2002189 | ROADLED MIDI 165W AEROSCREEN VISOR | PM99G15L165 | 1 | 964 | 10m RIGID STEEL COLUMN | IE/EB 10.0 | TYPE 3 RAGBOLT / TYPE 3 FOUNDATION | 1 | 996 | 4.5m MAJOR ROAD OUTREACH (32NB) | IE4.5CPS | 991 | 5° | 12m | V | FAIRFIELD COUNCIL |
| | NEW | 302886 | 2002190 | ROADLED MIDI 165W AEROSCREEN VISOR | PM99G15L165 | 1 | 964 | 10m RIGID STEEL COLUMN | IE/EB 10.0 | TYPE 3 RAGBOLT / TYPE 3 FOUNDATION | 1 | 996 | 4.5m MAJOR ROAD OUTREACH (32NB) | IE4.5CPS | 991 | 5° | 12m | V | FAIRFIELD COUNCIL |
| | NEW | 302887 | 2002191 | ROADLED 275W AEROSCREEN VISOR | PL99G11L275 | 1 | 774 | 10m RIGID STEEL COLUMN | IE/EB 10.0 | TYPE 3 RAGBOLT / TYPE 3 FOUNDATION | 1 | 996 | 4.5m MAJOR ROAD OUTREACH (32NB) | IE4.5CPS | 991 | 5° | 12m | V | FAIRFIELD COUNCIL |
| | NEW | 302888 | 1000886 | ROADLED 275W AEROSCREEN VISOR | PL99G11L275 | 1 | 774 | TIMBER POLE | - | - | 1 | - | 4.5m WOOD POLE OUTREACH | EI-B6 | 891 | 5° | 11m | V | FAIRFIELD COUNCIL |
| | NEW | 302889 | 2002193 | ROADLED 275W AEROSCREEN VISOR | PL99G11L275 | 1 | 774 | 10m RIGID STEEL COLUMN | IE/EB 10.0 | TYPE 3 RAGBOLT / TYPE 3 FOUNDATION | 1 | 996 | 4.5m MAJOR ROAD OUTREACH (32NB) | IE4.5CPS | 991 | 5° | 12m | V | FAIRFIELD COUNCIL |

ASP LEVEL 2 TO RE-ESTABLISH EXISTING SERVICE CONNECTION.

NOTE:
- THIS PROJECT ASSUMES THE COMPLETION OF ARP4984.

CERTIFIED BY ENDEAVOUR ENERGY
Amendment: D
Date Approved: 12-11-2024
Examiner's Signature: Ali Siddiqui
Print Name: Ali Siddiqui
This Certification is issued subject to Endeavour Energy's Standard Certification Terms

ATTENTION
ALL SERVICES SEARCHES MUST BE CHECKED BEFORE CONSTRUCTION.

BEFORE YOU DIG
www.byda.com.au

WORKS COMPLETED/FIELD BOOK
CONSTRUCTED BY:
WORKS COMPLETED:
SIGNATURE: DATE:
INSPECTED BY:
SIGNATURE: DATE:

ASSET RECORDING
I:
OF:
CONTACT No.:
HEREBY CERTIFY THAT ASSETS MARKED AS-BUILT ON THIS DRAWING HAVE BEEN RECORDED AS PER ENDEAVOR ENERGY STANDARD SAD 0004.
SIGNATURE:
DATE:

Cadastre: © Land and Property Information 2016

AMENDMENTS
ORIGINAL ISSUE
A DRAFT No. 05
B 11/03/2024 P. P. CHK'D D. S. DRWN MOVE POLE / PILLAR LOCATION AND REPLACED POLE
C 8/04/2024 P. P. CHK'D D. S. DRWN MOVE POLE REF '61' & ESTABLISH STJ AT REF '60'
D 4/11/2024 P. P. CHK'D D. S. DRWN UPRATE POLE SUB AT REF 28 & REVISED EARTHING REF 61

CLIENT:
JOHN HOLLAND M7→M12 Integration Project
NSW GOVERNMENT Transport for NSW

wsp
Level 27, Ernst & Young Centre
680 George Street
Sydney NSW 2000
GPO BOX 5394
Sydney NSW 2001 Australia
Telephone +61 2 9272 5100
Facsimile +61 2 9272 5101
Email: sydney@wsp.com
ASP REF/ACCREDIATION NO. - 5045

TEMPLATE VERSION No.5.20

© THIS DRAWING AND THE COPYRIGHT THEREIN IS THE PROPERTY OF ENDEAVOUR ENERGY AND MAY NOT BE COPIED, REPRODUCED, DISTRIBUTED, LOANED OR USED WITHOUT THE WRITTEN CONSENT OF ENDEAVOUR ENERGY

| REFERENCE DRAWING'S | |
|---|---|
| ULL1937 | CONNECTION OF LOAD |

| WORK ORDERS | |
|---|---|
| GENERAL | |
| OVERHEAD | |
| UNDERGROUND | |
| SUBSTATIONS | |

| | |
|---|---|
| CAMS File No. | ARP4983 |
| AM PROJ. No. | |
| HV SWITCHING | 3284 |
| EE DEPOT | HOXTON PARK |
| EE REGION | CENTRAL |
| HV OP DIAG | KEMPS CREEK 1 D11 |
| LOCAL GOV AREA | LIVERPOOL |

ORIGINAL SCALE
DRAWN DARSHAN S
DATE 17/07/2023
CH'D PRAMOD P

DO NOT SCALE
DIMENSIONS IN METRES
GDA94/MGA56 COORDINATE SYSTEM
DESIGN DARSHAN S

ELIZABETH DRIVE
CECIL PARK
ARP4983
ASSET RELOCATION
M12 EAST - ELIZABETH DRIVE CONNECTION

Endeavour Energy
A1 526458 D
SHEET No 6 OF 9 SHEETS

92119

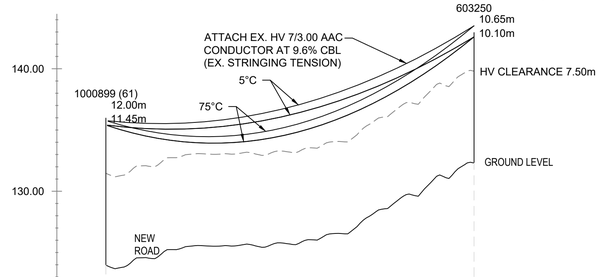


| Structure chainage (m) | 0.00 | - 120.22 - | 120.22 |
|---|---|---|---|
| Ground elevation (m) | 124.0 | | 132.3 |
| Chainage (m) | 0.00m | | 100.00m |

## POLE PROFILE (1000899 - 603250) ALONG PRIVATE ROAD

X axis scale 1:1000

Y axis scale 1: 200

RESULTS PRODUCED BY POWER LINES PRO VERSION 2.2.0

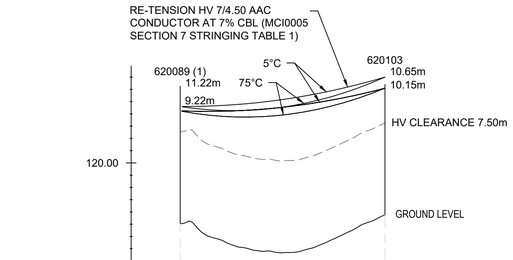


| Structure chainage (m) | 0.00 | - 66.88 - | 66.88 |
|---|---|---|---|
| Ground elevation (m) | 115.0 | | 115.7 |
| Chainage (m) | 0.00m | | |

## POLE PROFILE (620089 - 620103) ALONG PRIVATE PROPERTY

X axis scale 1:1000

Y axis scale 1: 200

RESULTS PRODUCED BY POWER LINES PRO VERSION 2.2.0

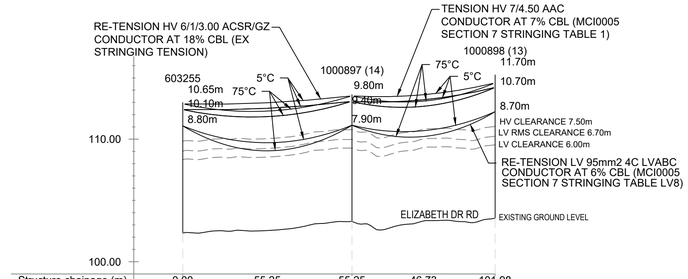


| Structure chainage (m) | 0.00 | - 55.25 - | 55.25 | - 46.73 - | 101.98 |
|---|---|---|---|---|---|
| Ground elevation (m) | 102.3 | | 103.3 | | 103.5 |
| Deviation | | | 4.8° R | | |
| Chainage (m) | 0.00m | | | | 100.00m |

## POLE PROFILE (603255 - 1000898) ALONG DUFF ROAD

X axis scale 1:1000

Y axis scale 1: 200

RESULTS PRODUCED BY POWER LINES PRO VERSION 2.2.0

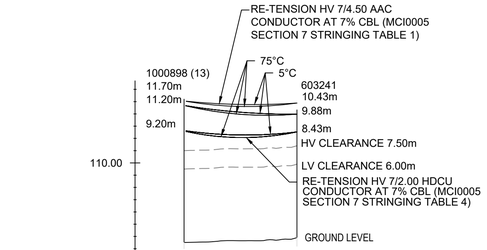


| Structure chainage (m) | 0.00 | - 36.85 - | 36.85 |
|---|---|---|---|
| Ground elevation (m) | 103.5 | | 103.9 |
| Chainage (m) | 0.00m | | |

## POLE PROFILE 1000898 - 303241) ALONG ELIZABETH DRIVE

X axis scale 1:1000

Y axis scale 1: 200

RESULTS PRODUCED BY POWER LINES PRO VERSION 2.2.0

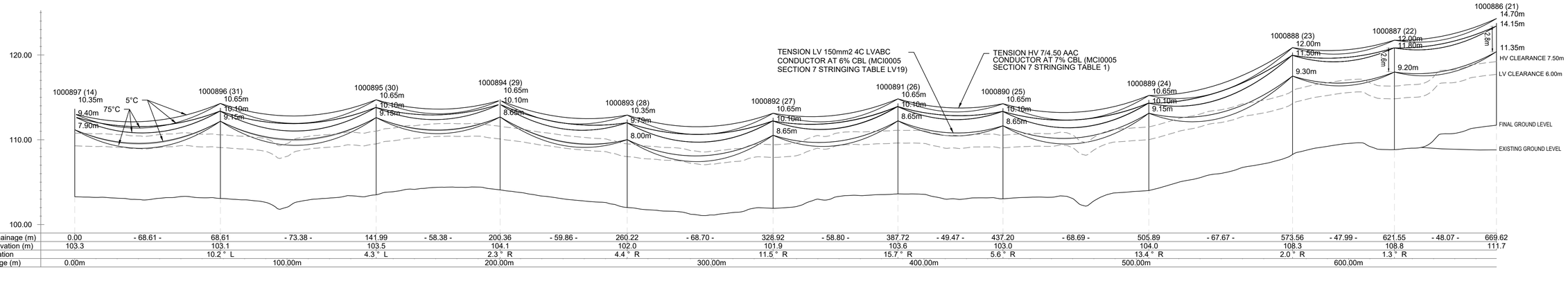


| Structure chainage (m) | 0.00 | - 68.61 - | 68.61 | - 73.38 - | 141.99 | - 58.38 - | 200.36 | - 59.86 - | 260.22 | - 68.70 - | 328.92 | - 58.80 - | 387.72 | - 49.47 - | 437.20 | - 68.69 - | 505.89 | - 67.67 - | 573.56 | - 47.99 - | 621.55 | - 48.07 - | 669.62 |
|---|---|---|---|---|---|---|---|---|---|---|---|---|---|---|---|---|---|---|---|---|---|---|---|
| Ground elevation (m) | 103.3 | | 103.1 | | 103.5 | | 104.1 | | 102.0 | | 101.9 | | 103.6 | | 103.0 | | 104.0 | | 108.3 | | 108.8 | | 111.7 |
| Deviation | | | 10.2 ° L | | 4.3 ° L | | 2.3 ° R | | 4.4 ° R | | 11.5 ° R | | 15.7 ° R | | 5.6 ° R | | 13.4 ° R | | 2.0 ° R | | 1.3 ° R | | |
| Chainage (m) | 0.00m | | | 100.00m | | | 200.00m | | | 300.00m | | | 400.00m | | | | 500.00m | | | | 600.00m | | |

## POLE PROFILE (1000886 - 1000897) ALONG ELIZABETH DRIVE

X axis scale 1:1000

Y axis scale 1: 200

RESULTS PRODUCED BY POWER LINES PRO VERSION 2.2.0

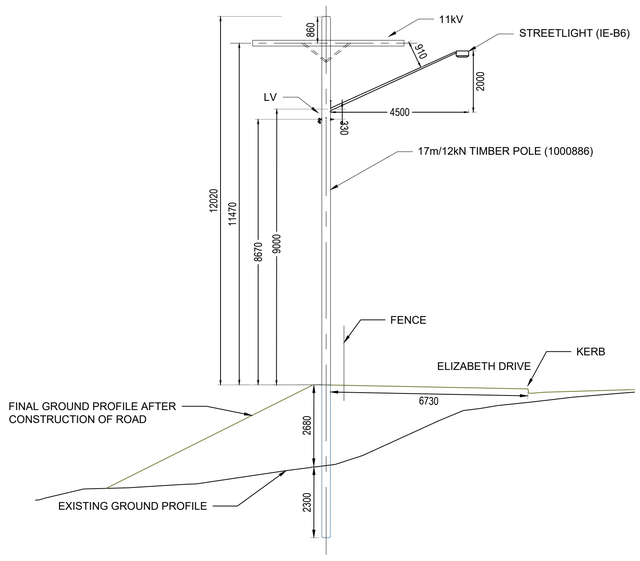


## POLE 1000886 (21) DETAIL PROFILE

SCALE -NTS

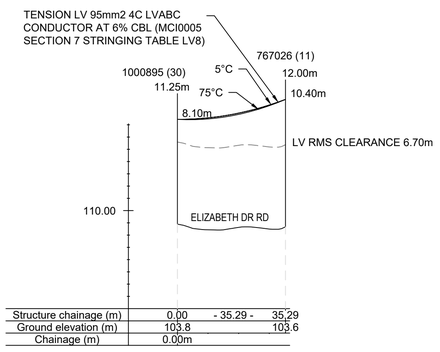


| Structure chainage (m) | 0.00 | - 35.29 - | 35.29 |
|---|---|---|---|
| Ground elevation (m) | 103.8 | | 103.6 |
| Chainage (m) | 0.00m | | |

## POLE PROFILE (1000895 - 767026) ACROSS ELIZABETH DRIVE

X axis scale 1:1000

Y axis scale 1: 200

RESULTS PRODUCED BY POWER LINES PRO VERSION 2.2.0

NOTE:
- THIS PROJECT ASSUMES THE COMPLETION OF ARP4984.

ASP LEVEL 2 TO RE-ESTABLISH EXISTING SERVICE CONNECTION.

**CERTIFIED BY ENDEAVOUR ENERGY**

Amendment: D

Date Approved: 12-11-2024

Examiner's Signature: Ali Siddiqui

Print Name: Ali Siddiqui

This Certification is issued subject to Endeavour Energy's Standard Certification Terms

**WORKS COMPLETED/FIELD BOOK**

CONSTRUCTED BY:

WORKS COMPLETED:

SIGNATURE: DATE:

INSPECTED BY:

SIGNATURE: DATE:

**ASSET RECORDING**

I:

OF:

CONTACT No.:

HEREBY CERTIFY THAT ASSETS MARKED AS-BUILT ON THIS DRAWING HAVE BEEN RECORDED AS PER ENDEAVOR ENERGY STANDARD SAD 0004.

SIGNATURE:

DATE:

**ATTENTION**

ALL SERVICES SEARCHES MUST BE CHECKED BEFORE CONSTRUCTION.

BEFORE YOU DIG
www.byda.com.au

Cadastre: © Land and Property Information 2016

| AMENDMENTS | | |
|---|---|---|
| A | ORIGINAL ISSUE | |
| | DRAFT No. 05 | |
| B | 11/03/2024 | |
| | CHK'D | P. P. |
| | DRWN | D. S. |
| | MOVE POLE / PILLAR LOCATION AND REPLACED POLE | |
| C | 8/04/2024 | |
| | CHK'D | P. P. |
| | DRWN | D. S. |
| | MOVE POLE REF 61' & ESTABLISH STJ AT REF 60' | |
| D | 4/11/2024 | |
| | CHK'D | P. P. |
| | DRWN | D. S. |
| | UPRATE POLE SUB AT REF 28 & REVISED EARTHING REF 61 | |

CLIENT: JOHN HOLLAND M7→M12 Integration Project; NSW GOVERNMENT; Transport for NSW


wsp
Level 27, Ernst & Young Centre
680 George Street
Sydney NSW 2000
GPO BOX 5394
Sydney NSW 2001 Australia
Telephone +61 2 9272 5100
Facsimile +61 2 9272 5101
Email: sydney@wsp.com
ASP REF/ACCREDIATION NO. - 5045


TEMPLATE VERSION No.5.20


© THIS DRAWING AND THE COPYRIGHT THEREIN IS THE PROPERTY OF ENDEAVOUR ENERGY AND MAY NOT BE COPIED, REPRODUCED, DISTRIBUTED, LOANED OR USED WITHOUT THE WRITTEN CONSENT OF ENDEAVOUR ENERGY


| REFERENCE DRAWING'S | |
|---|---|
| ULL1937 | CONNECTION OF LOAD |
| | |
| | |
| | |

| WORK ORDERS | |
|---|---|
| GENERAL | |
| OVERHEAD | |
| UNDERGROUND | |
| SUBSTATIONS | |

| | |
|---|---|
| CAMS File No. | ARP4983 |
| AM PROJ. No. | |
| HV SWITCHING | 3284 |
| EE DEPOT | HOXTON PARK |
| EE REGION | CENTRAL |
| HV OP DIAG | KEMPS CREEK 1 D11 |
| LOCAL GOV AREA | LIVERPOOL |

ORIGINAL SCALE

| | |
|---|---|
| DRAWN | DARSHAN S |
| DATE | 17/07/2023 |
| CH'D | PRAMOD P |

DO NOT SCALE
DIMENSIONS IN METRES
GDA94/MGA56 COORDINATE SYSTEM

| | |
|---|---|
| DESIGN | DARSHAN S |

ELIZABETH DRIVE
CECIL PARK
ARP4983
ASSET RELOCATION
M12 EAST - ELIZABETH DRIVE CONNECTION

Endeavour Energy

A1 | 526458 | D

SHEET No 7 OF 9 SHEETS

92119

## BLOWOUT PLAN

0 20 40 60 80 100m

201510 5

SCALE 1:1000 @ A1

ASP LEVEL 2 TO RE-ESTABLISH EXISTING SERVICE CONNECTION.

NOTE:
- THIS PROJECT ASSUMES THE COMPLETION OF ARP4984.

ATTENTION
ALL SERVICES SEARCHES MUST BE CHECKED BEFORE CONSTRUCTION.

BEFORE YOU DIG
www.byda.com.au

### CERTIFIED BY ENDEAVOUR ENERGY

Amendment: D
Date Approved: 12-11-2024
Examiner's Signature: Ali Siddiqui
Print Name: Ali Siddiqui

This Certification is issued subject to Endeavour Energy's Standard Certification Terms

### WORKS COMPLETED/FIELD BOOK

CONSTRUCTED BY:
WORKS COMPLETED:
SIGNATURE: DATE:
INSPECTED BY:
SIGNATURE: DATE:

### ASSET RECORDING

I:
OF:
CONTACT No.:

HEREBY CERTIFY THAT ASSETS MARKED AS-BUILT ON THIS DRAWING HAVE BEEN RECORDED AS PER ENDEAVOR ENERGY STANDARD SAD 0004.

SIGNATURE:
DATE:

Cadastre: © Land and Property Information 2016

| AMENDMENTS | | |
|---|---|---|
| A | ORIGINAL ISSUE | |
| | DRAFT No. 05 | |
| B | 11/03/2024 | P. P. |
| CHK'D | | D. S. |
| DRWN | | |
| C | 8/04/2024 | P. P. |
| CHK'D | | D. S. |
| DRWN | | |
| D | 4/11/2024 | P. P. |
| CHK'D | | D. S. |
| DRWN | | |

MOVE POLE / PILLAR LOCATION AND REPLACED POLE
MOVE POLE REF '61' & ESTABLISH STJ AT REF '60'
UPRATE POLE SUB AT REF 28 & REVISED EARTHING REF 61

CLIENT:
JOHN HOLLAND M7→M12 Integration Project
NSW GOVERNMENT Transport for NSW

wsp
Level 27, Ernst & Young Centre
680 George Street
Sydney NSW 2000
GPO BOX 5394
Sydney NSW 2001 Australia
Telephone +61 2 9272 5100
Facsimile +61 2 9272 5101
Email: sydney@wsp.com
ASP REF/ACCREDIATION NO. - 5045

TEMPLATE VERSION No.5.20

© THIS DRAWING AND THE COPYRIGHT THEREIN IS THE PROPERTY OF ENDEAVOUR ENERGY AND MAY NOT BE COPIED, REPRODUCED, DISTRIBUTED, LOANED OR USED WITHOUT THE WRITTEN CONSENT OF ENDEAVOUR ENERGY

| REFERENCE DRAWING'S | |
|---|---|
| ULL1937 | CONNECTION OF LOAD |

| WORK ORDERS | |
|---|---|
| GENERAL | |
| OVERHEAD | |
| UNDERGROUND | |
| SUBSTATIONS | |

| | |
|---|---|
| CAMS File No. | ARP4983 |
| AM PROJ. No. | |
| HV SWITCHING | 3284 |
| EE DEPOT | HOXTON PARK |
| EE REGION | CENTRAL |
| HV OP DIAG | KEMPS CREEK 1 D11 |
| LOCAL GOV AREA | LIVERPOOL |

ORIGINAL SCALE

| | |
|---|---|
| DRAWN | DARSHAN S |
| DATE | 17/07/2023 |
| CH'D | PRAMOD P |
| DESIGN | DARSHAN S |

DO NOT SCALE
DIMENSIONS IN METRES
GDA94/MGA56 COORDINATE SYSTEM

ELIZABETH DRIVE
CECIL PARK
ARP4983
ASSET RELOCATION
M12 EAST - ELIZABETH DRIVE CONNECTION

Endeavour Energy

A1 | 526458 | D

SHEET No 8 OF 9 SHEETS

92119

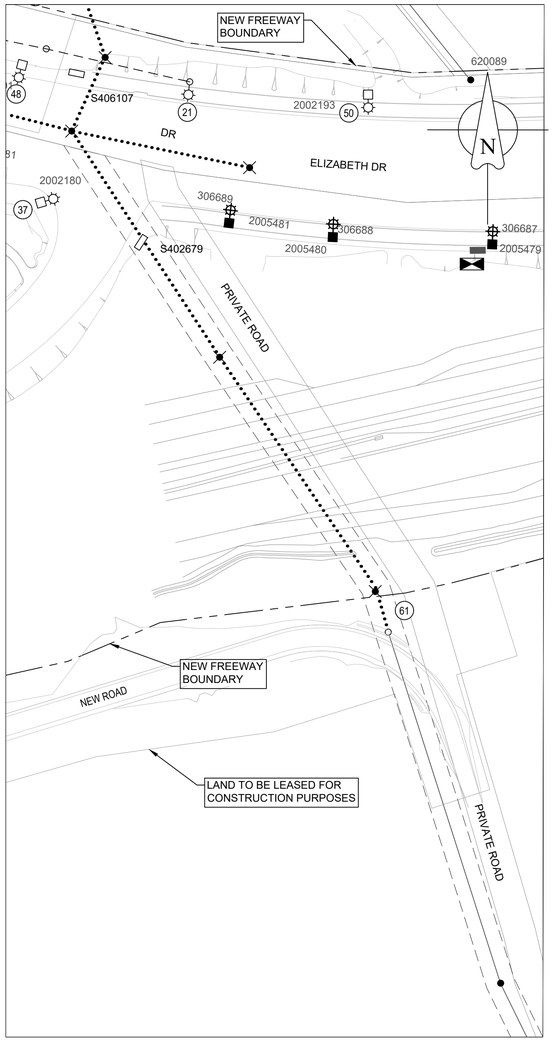


## EXISTING EASEMENT PLAN

0 20 40 60 80 100m

SCALE 1:1000 @ A1

### EASEMENT PLAN LEGEND

EXISTING ENDEAVOUR ENERGY EASEMENT FOR TRANSMISSION LINE 9.145m WIDTH VIDE DP116173

NEW FREEWAY BOUNDARY

**NOTE:**
- EXISTING EASEMENT SHOWN ON THE DESIGN ARE BASED ON ENDEAVOUR ENERGY RECORDS AND TfNSW FILE NO. SF2019/158153 SKETCH SR5334 AMENDED 20/11/2020. NO EASEMENT RELINQUISH HAS BEEN PROPOSED UNDER THIS PROJECT.

ATTENTION

ALL SERVICES SEARCHES MUST BE CHECKED BEFORE CONSTRUCTION.

BEFORE YOU DIG
www.byda.com.au

Cadastre: © Land and Property Information 2016

| LUMINAIRE LOCATION DETAIL | | | | | |
|---|---|---|---|---|---|
| REFERENCE NUMBER | EASTING | NORTHING | MOUNTING HEIGHT (m) | POLE TYPE | OFFSET DETAIL |
| 37 | 299418.601 | 6249480.443 | 12 | Rigid | Detail B |
| 38 | 299392.837 | 6249493.65 | 12 | Rigid | Detail F |
| 39 | 299341.048 | 6249500.851 | 12 | Rigid | Detail F |
| 40 | 299291.92 | 6249506.002 | 12 | Rigid | Detail F |
| 41 | 299255.178 | 6249506.321 | 12 | Rigid | Detail F |
| 42 | 299212.443 | 6249501.311 | 12 | Rigid | Detail F |
| 43 | 299169.741 | 6249489.518 | 12 | Rigid | Detail F |
| 44 | 299134.449 | 6249474.619 | 12 | Rigid | Detail F |
| 45 | 299101.223 | 6249455.254 | 12 | Rigid | Detail F |
| 46 | 299290.414 | 6249544.136 | 12 | Rigid | Detail F |
| 47 | 299345.607 | 6249538.891 | 12 | Rigid | Detail F |
| 48 | 299412.7 | 6249526.796 | 12 | Rigid | Detail F |
| 50 | 299525.455 | 6249515.663 | 12 | Rigid | Detail B |

Note: Coordinates provide on GDA 2020 refer street light design M12EDD-WSP-ALL-LV-DRG-009999 for details.

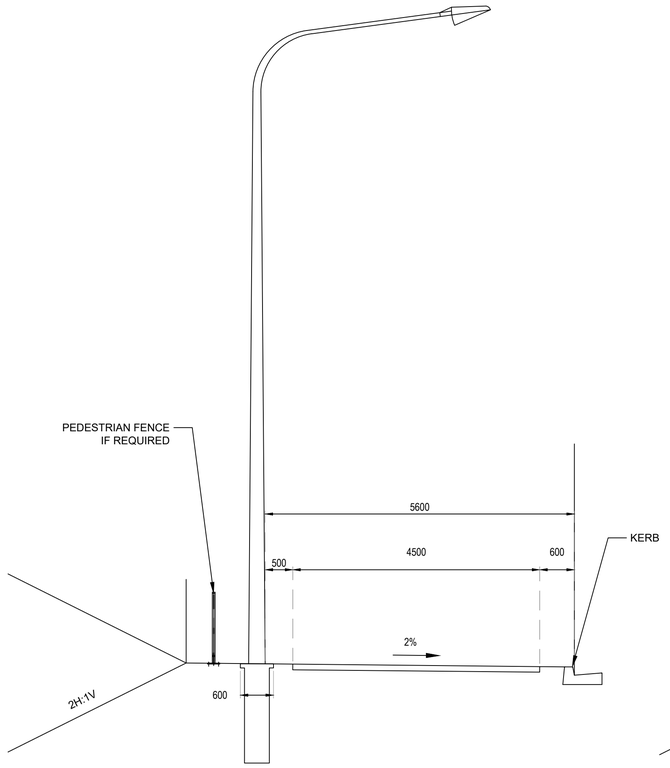


**OFFSET DETAIL B**
**POLE BEHIND SUP**
**ELIZABETH DR, WALLGROVE RD & CECIL RD**
(NTS)

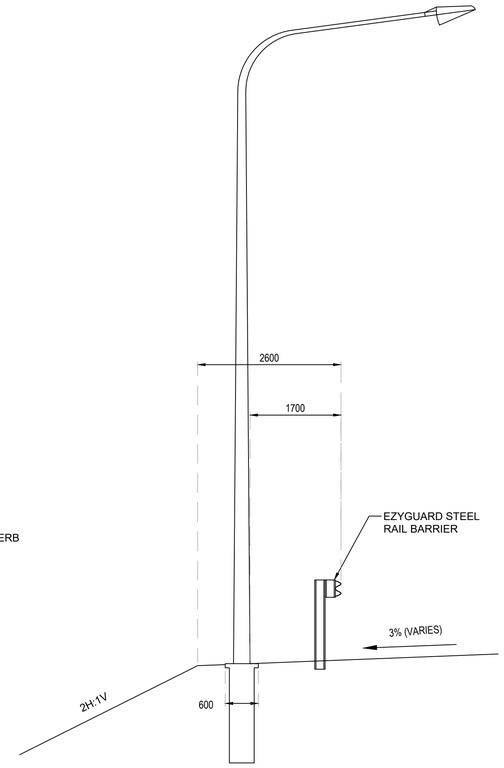


**OFFSET DETAIL F**
**LIGHT POLE BEHIND EZYGUARD STEEL RAIL BARRIER**
**ELIZABETH DRIVE AND WALLGROVE ROAD**
(NTS)

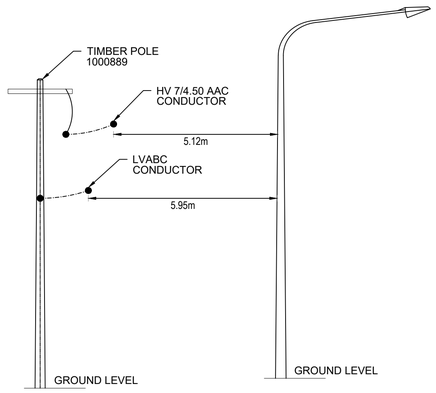


**BLOWOUT PROFILE COLUMN 2002189**
(NTS)

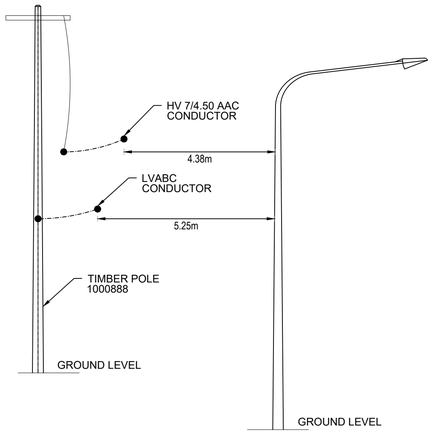


**BLOWOUT PROFILE COLUMN 2002190**
(NTS)

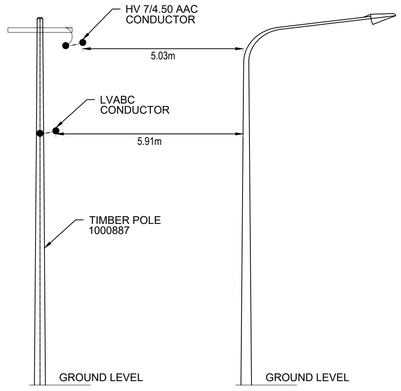


**BLOWOUT PROFILE COLUMN 2002191**
(NTS)

CERTIFIED BY ENDEAVOUR ENERGY
Amendment: D
Date Approved: 12-11-2024
Examiner's Signature: Ali Siddiqui
Print Name: Ali Siddiqui
This Certification is issued subject to Endeavour Energy's Standard Certification Terms

WORKS COMPLETED/FIELD BOOK
CONSTRUCTED BY:
WORKS COMPLETED:
SIGNATURE: DATE:
INSPECTED BY:
SIGNATURE: DATE:

ASSET RECORDING
I:
OF:
CONTACT No.:
HEREBY CERTIFY THAT ASSETS MARKED AS-BUILT ON THIS DRAWING HAVE BEEN RECORDED AS PER ENDEAVOR ENERGY STANDARD SAD 0004.
SIGNATURE:
DATE:

AMENDMENTS

| | | |
|---|---|---|
| A | ORIGINAL ISSUE | |
| | DRAFT No. 05 | |
| B | 11/03/2024 | |
| | CHK'D | P. P. |
| | DRWN | D. S. |
| | MOVE POLE / PILLAR LOCATION AND REPLACED POLE | |
| C | 9/08/2024 | |
| | CHK'D | P. P. |
| | DRWN | D. S. |
| | MOVE POLE REF '61' & ESTABLISH STJ AT REF '60' | |
| D | 4/11/2024 | |
| | CHK'D | P. P. |
| | DRWN | D. S. |
| | UPRATE POLE SUB AT REF 28 & REVISED EARTHING REF 61 | |

CLIENT: JOHN HOLLAND M7→M12 Integration Project; NSW GOVERNMENT Transport for NSW


wsp
Level 27, Ernst & Young Centre
680 George Street
Sydney NSW 2000
GPO BOX 5394
Sydney NSW 2001 Australia
Telephone +61 2 9272 5100
Facsimile +61 2 9272 5101
Email: sydney@wsp.com
ASP REF/ACCREDIATION NO. - 5045


TEMPLATE VERSION No.5.20

© THIS DRAWING AND THE COPYRIGHT THEREIN IS THE PROPERTY OF ENDEAVOUR ENERGY AND MAY NOT BE COPIED, REPRODUCED, DISTRIBUTED, LOANED OR USED WITHOUT THE WRITTEN CONSENT OF ENDEAVOUR ENERGY

| REFERENCE DRAWING'S | |
|---|---|
| ULL1937 | CONNECTION OF LOAD |

| WORK ORDERS | |
|---|---|
| GENERAL | |
| OVERHEAD | |
| UNDERGROUND | |
| SUBSTATIONS | |

| | |
|---|---|
| CAMS File No. | ARP4983 |
| AM PROJ. No. | |
| HV SWITCHING | 3284 |
| EE DEPOT | HOXTON PARK |
| EE REGION | CENTRAL |
| HV OP DIAG | KEMPS CREEK 1 D11 |
| LOCAL GOV AREA | LIVERPOOL |

ORIGINAL SCALE

| | |
|---|---|
| DRAWN | DARSHAN S |
| DATE | 17/07/2023 |
| CH'D | PRAMOD P |
| DESIGN | DARSHAN S |

DO NOT SCALE
DIMENSIONS IN METRES
GDA94/MGA56 COORDINATE SYSTEM

ELIZABETH DRIVE
CECIL PARK
ARP4983
ASSET RELOCATION
M12 EAST - ELIZABETH DRIVE CONNECTION

Endeavour Energy

A1 | 526458 | D

SHEET No 9 OF 9 SHEETS

92119