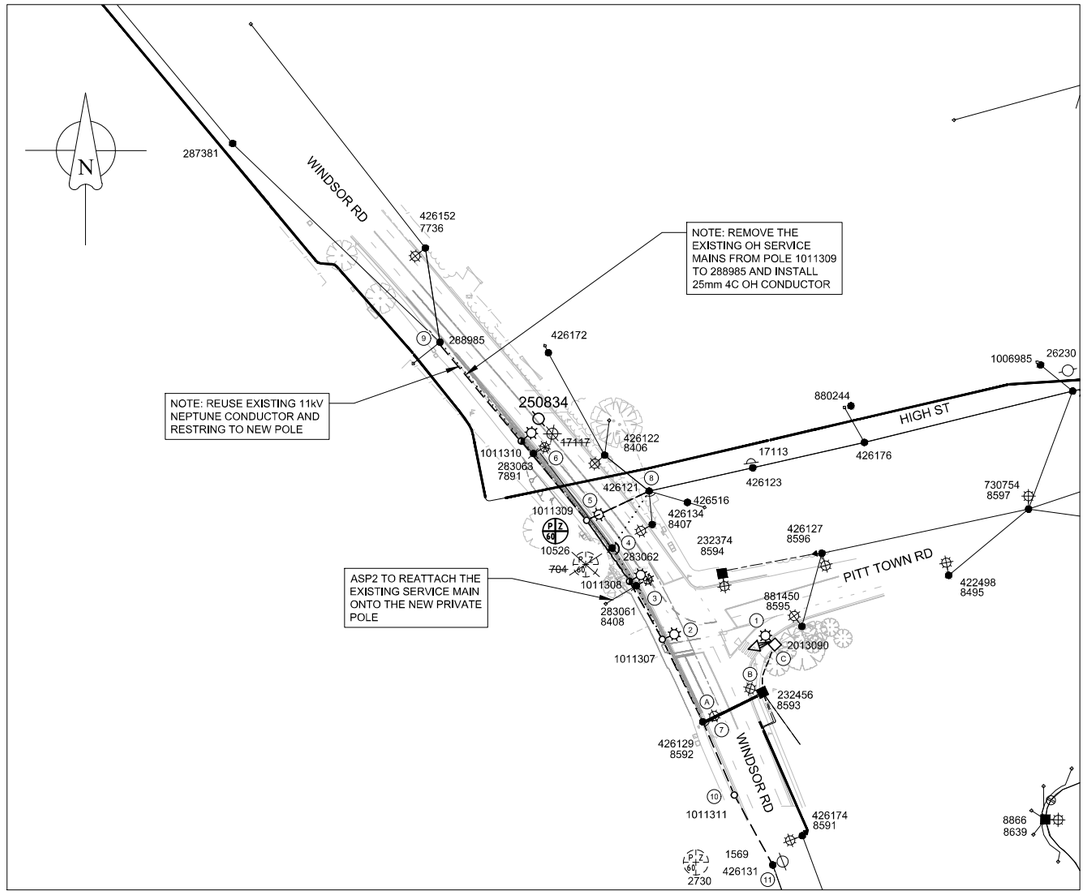

SITE PLAN

SCALE 1:1000

0 10 20 30 40 50

1:1000

ATTENTION
SERVICE PROVIDER TO NOTIFY ENDEAVOUR ENERGY'S NETWORK DATA BRANCH DAILY WHEN CABLE / DUCT WORK IS IN PROGRESS. PHONE: 9853 4161

ATTENTION
ALL SERVICES SEARCHES MUST BE CHECKED BEFORE CONSTRUCTION

NEW	EXISTING	NEW	REMOVE	EXISTING	REPLACE	BRACKET	MOUNTING HEIGHT (m)	SPAN LENGTH	LINE DEV DEGREES	HV	LV	SL	DIA. (mm)	DEPTH (m)	TYPE	STAY	FOOTING	RELOCATE	REPLACE	NEW	EXISTING	REMOVE	DESIGN NUMBER
FIELD POLE NUMBER		LANTERNS						CONSTRUCTION					HOLE		POLE								
426131								0	0	EX. B23	EX. B03	EX. A01	EX.	EX.	EX.						X		11
1011311								26	0	B21	B01	A01	600	1.85	11/8		P			X			10
	288985							41.9	0	B23	A05	A05	EX.	EX.	EX.						X		9
	426121							22.53	77.67	B23	B03	A03	EX.	EX.	EX.						X		8
	426129			X		EX.	EX.	26.07	0	B21	B01	A03	EX.	EX.	EX.						X		7
1011310	283062				X	B5	9.5	33.44	0	HABS - AB	A01	A01	600	1.85	12.5/8			X					6
1011309		X				B5	9.5	24.30	0	B23 + B25	B05 + B05 + A05	A03 + A05	600	2.30	14/12		P	X					5
	283062								0	EX.	EX.	EX.	EX.	EX.	EX.							X	4
1011308	283061				X	B5	9.5	22.12	0	B23	B03	A01	600	1.85	12.5/8		P	X					3
1011307		X				B5	9.5	30.16	0	B21	B01	A01	600	1.85	12.5/8		P			X			2

OPERATIONAL LIMITATIONS

UNLESS APPROVED OTHERWISE, INTERRUPTIONS TO ANY CUSTOMER'S SUPPLY MUST BE AVOIDED.
THE FOLLOWING ALTERNATIVES SHOULD BE CONSIDERED:
- MOBILE GENERATORS OR SUBSTATIONS
- LIVE LINE WORK
- DESIGN ALTERNATIVES
- WORK PRACTICES / STANDARDS
- LOW VOLTAGE PARALLELS

THE COST IS TO BE FUNDED BY THE CUSTOMER / DEVELOPER

DUCT END LOCATION DETAIL

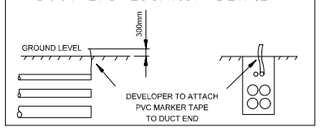

POLE/COLUMN SETOUT

POLE/COLUMN	EASTING	NORTHING
2013090	299066.9420	6278401.2810
1011307	299030.2480	6278402.9470
1011308	299019.4864	6278421.9126
1011309	299005.4736	6278441.8105
1011310	298984.1739	6278467.6767
1011311	299030.2480	6278402.9470

WORKS COMPLETED/FIELD BOOK

CONSTRUCTED BY: _____

WORKS COMPLETED: _____

SIGNATURE: _____ DATE: _____

INSPECTED BY: _____

SIGNATURE: _____ DATE: _____

ASSET RECORDING

I: _____

OF: _____

CONTACT No.: _____

HEREBY CERTIFY THAT ASSETS MARKED AS-BUILT ON THIS DRAWING HAVE BEEN RECORDED AS PER ENDEAVOUR ENERGY STANDARD SAD 0004.

SIGNATURE: _____

DATE: _____

HV TRENCH LENGTH: NIL
LV TRENCH LENGTH: 98.7m
TOTAL TRENCH LENGTH: 98.7m

DESIGN COMPLIANCE AND INDEMNITY

This design complies with Endeavour Energy's relevant standards as current at this time and as listed on the Endeavour Energy Accredited Service Provider's Internet site. These standards include, but are not limited to:

CP: Connection Policy
EMS: Environmental Management Standard
MDI: Mains Construction Instruction
MDI: Mains Design Instruction
PDI: Protection Design Instruction
SDI: Substation Design Instruction
SAD 0001: Design Drawing Standard
MMI: Mains Maintenance Instruction
SMI: Substation Maintenance Instruction
LDI 0001: Public lighting Electrical Design Element

Additionally, where relevant, the design complies with AS/NZS 7000 "Overhead Line Design - Detailed Procedures" published by The Australian Standards.

AECOM AUSTRALIA PTY LTD indemnifies Endeavour Energy for any loss or damage resulting from non-compliance of the design with the above standards.

Signed: _____

Name: HENRY LIEN

Service Provider Number: 2367 Date: 07/03/2025

SITE PLAN LEGEND

- EXISTING OVERHEAD MAINS
- EXISTING UNDERGROUND CABLE
- REMOVE EXISTING OVERHEAD
- NEW UNDERGROUND MAINS
- NEW OVERHEAD CONDUCTOR
- NEW LV TRENCH
- EXISTING POLE
- REMOVE POLE
- NEW POLE
- REPLACE POLE
- REMOVE SL LANTERN
- EXISTING SL LANTERN
- NEW SL LANTERN
- NEW SL FLOOD
- EXISTING PILLAR
- NEW COLUMN
- EXISTING COLUMN
- UGOH
- JOINT
- END SHACKLE
- EXISTING HV USL CLOSED
- EXISTING SL NIGHT WATCH
- EXISTING HV ABS CLOSE - REMOVE
- NEW HV ABS CLOSE
- NEW SLCP ZELL (XXXXX)
- EXISTING SLCP ZELL - REMOVE (XXXXX)

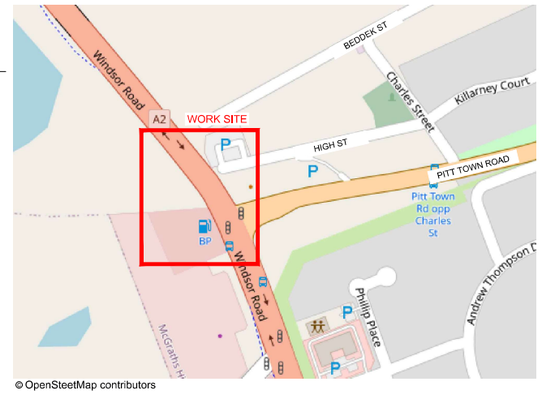

© OpenSteetMap contributors

LOCALITY PLAN

NOT TO SCALE

APPROVAL TO CONNECT TO PUBLIC LIGHTING

Reviewers Name: _____
Date Approved: _____
Reviewers Signature: _____

This approval is issued subject to Endeavour Energy's General Terms & Conditions for connection of Public Lighting Assets and is specifically for Drawing No. _____Amendment_____

WARNING

LIVE ENDEAVOUR ENERGY CABLES & OTHER SERVICES IN THIS AREA. PLEASE CONTACT DIAL BEFORE YOU DIG ON TEL: 1100 FOR SEARCHES TWO DAYS PRIOR TO EXCAVATION.

CERTIFIED BY ENDEAVOUR ENERGY

Amendment: _____
Date Approved: _____
Examiner's Signature: _____
Print Name: _____

This Certification is issued subject to Endeavour Energy's Standard Certification Terms

KEY DOCUMENTS TABLE

THE CERTIFICATION OF THIS PROJECT IS SUPPORTED BY THE FOLLOWING KEY DOCUMENTS

DOCUMENT NAME	NOTATION DATE
SUMMARY OF ENVIRONMENTAL REPORT (SER) - FAT0038 PART OF EMS0003	14/03/2025
DESIGN SAFETY REPORT	14/03/2025
EQUIPMENT TO BE RETURNED TO ENDEAVOUR ENERGY - FPJ5013	14/03/2025

FUNDING ARRANGEMENTS FOR SCOPE OF WORKS

ASP LEVEL 1 ELECTRICAL WORKS

ENDEAVOUR ENERGY SUPPLIED MATERIALS

N/A

ENDEAVOUR ENERGY FUNDED & CONSTRUCTED

Works Required Prior to Completion of Customer Contestable Project	Works Required in Association of Customer Contestable Project
N/A	N/A

ENDEAVOUR ENERGY FUNDED & ASP L1 CONSTRUCTED – REIMBURSEMENT (exc GST)

N/A

CUSTOMER FUNDED NON–CONTESTABLE WORKS

INSPECTION AND ACCESS AUTHORITY
- SYSTEM SWITCHING
- PROVISION OF ACCESS AUTHORITY (AS PER FEE SENT BY EE's CWA's)

CUSTOMER FUNDED CONTESTABLE WORKS

ALL OTHER WORKS AND MATERIALS INCLUDING BUT NOT LIMITED TO:
- POLES REMOVAL AND INSTALLATION
- STREET LIGHTING ASSETS (REMOVAL AND INSTALLATION)
- OVERHEAD INSTALLATION
- TRENCHING
- DUCT INSTALLATION

CUSTOMER

CUSTOMER FUNDED

INCLUDES BUT NOT LIMITED TO:
- PEGGING OF PROPERTY BOUNDARIES AND INFRASTRUCTURE LOCATIONS
- PROVIDING SITE ACCESS
- CONFIRM FINISHED GROUND LEVELS

EXISTING DUCT USAGE CHARGES (exc GST)

$176

CO–ORDINATION SUPPLY REQUIRED DATE

(TO BE CONFIRMED BY THE CUSTOMER)

DAY: 01 MONTH: 06 YEAR: 2025

ASSET TO BE RETURNED TO NEAREST ENDEAVOUR ENERGY DEPOT BY L1 ASP

- 3 x TIMBER POLE
- HV ABS

NOTES

1. THIS DRAWING IS TO BE READ IN CONJUNCTION WITH THE RELEVANT ENDEAVOUR ENERGY NETWORK STANDARDS AND CONNECTION POLICY.
2. ENDEAVOUR ENERGY CONTACT PHONE: 131 081.
3. DESIGN CERTIFICATION SHALL LAPSE WHERE:-
   (i) NOTICE OF INTENT HAS NOT BEEN RECEIVED WITHIN SIX (6) MONTHS OF THIS CERTIFICATION;
   OR
   (ii) WORKS COMPLETED CONSTRUCTION HAS BEEN INTERRUPTED FOR MORE THAN SIX (6) MONTHS.
   WHERE DESIGN CERTIFICATION HAS LAPSED THE DESIGN MUST BE RESUBMITTED FOR CERTIFICATION BY THE ACCREDITED DESIGNER.
4. ATTENTION
   PERMANENT SURVEY MARKS MAY EXIST IN THIS AREA. THESE MARKS ARE TO BE LOCATED BY A SURVEYOR PRIOR TO COMMENCEMENT OF ANY WORKS.
5. ATTENTION
   ALL SERVICES SEARCHES MUST BE CHECKED BEFORE CONSTRUCTION.
6. WARNING
   LIVE ENDEAVOUR ENERGY CABLES AND OTHER SERVICES IN THIS AREA. PLEAS CONTACT DIAL BEFORE YOU DIG ON TELEPHONE: 1100 FOR SEARCH TWO (2) DAYS PRIOR TO EXCAVATION.
7. ATTENTION
   SERVICE PROVIDER TO NOTIFY ENDEAVOUR ENERGY'S ASSET DATA CUSTOMER DEPARTMENT DAILY WHEN CABLE WORKS IS IN PROGRESS. TELEPHONE: 131 081.
8. OPERATIONAL LIMITS
   UNLESS APPROVED OTHERWISE, INTERRUPTION TO ANY CUSTOMER'S SUPPLY MUST BE AVOIDED. THE FOLLOWING ALTERNATIVES SHOULD BE CONSIDERED:
   - MOBILE GENERATOR AND SUBSTATIONS;
   - LIVE LINE WORK;
   - DESIGN ALTERNATIVES'
   - LOW VOLTAGE PARALLELS;
   - WORK PRACTICE/STANDARDS;

   THE COST TO BE FUNDED BY THE CUSTOMER/DEVELOPER.
9. REIMBURSEMENTS WILL BE PAID TO THE NOMINATED PARTY ON THE LETTER OF INTENT AFTER THE WORKS HAVE BEEN COMPLETED AND THE LETTER OF ACCEPTANCE HAS BEEN ISSUED. THE REIMBURSED AMOUNT IS SHOWN IN THE FUNDING ARRANGEMENTS FOR SCOPE OF WORK. ANY DISAGREEMENT WITH THE AMOUNT SHOULD BE RESOLVED WITH ENDEAVOUR ENERGY PRIOR TO THE COMMENCEMENT OF WORKS.
10. HAVE ALL THE EXISTING ASSETS BEEN FIELD CHECKED AND ARE ACCURATE AT THE TIME OF DESIGN?
    YES / NO
11. ENVIRONMENTAL MANAGEMENT PLAN: EMP EMS0001 IS PART OF THE DESIGN.

LIGHTING EQUIPMENT SCHEDULE

ITEM ID	STATE	SL NUMBER		SUPPORT NUMBER		LUMINAIRE					COLUMN/POLE					BRACKET/OUTREACH			UPCAST	CATEGORY	CHARGE TO
		NEW	EXISTING	NEW	EXISTING	DESCRIPTION	PART NO	QTY	RATE CODE	MOUNTING HEIGHT	DESCRIPTION	PART NO	FOOTING (FOUNDATION/RAGBOLT)	QTY	RATE CODE	DESCRIPTION	PART NO	RATE CODE			
1	NEW	316955	-	2013090	-	ROADLED MIDI 120W 4K STANDARD VISOR	PM99G01L120	1	772	9m	7m IMPACT ABSORBING COLUMN	IE 7.0 IA	TYPE 2 RAGBOLT	1	995	4.5m CURVED PIPE OUTREACH	IE 4.5 CPS	991	5°	V3	HAWKESBURY CITY COUNCIL (100%)
		316956				175W SASTA MAXIMUS ASYMMETRICAL FLOODLIGHT	SL99G15L175	1	968											PX1	
2	NEW	316949	-	1011307	-	ROADLED MIDI 61W 3K STANDARD VISOR	PM30G01L61	1	768	9.5m	TIMBER POLE	IEB5	N/A	1	996	B5 WOOD POLE BRACKET	IE B5	891	5°	V3	HAWKESBURY CITY COUNCIL (100%)
3	NEW	316950	8408	1011308	283061	ROADLED MIDI 61W 3K STANDARD VISOR	PM30G01L61	1	768	9.5m	TIMBER POLE	IEB5	N/A	1	996	B5 WOOD POLE BRACKET	IE B5	891	5°	V3	HAWKESBURY CITY COUNCIL (100%)
5	NEW	316951	-	1011309	-	ROADLED MIDI 61W 3K STANDARD VISOR	PM30G01L61	1	768	9.5m	TIMBER POLE	IEB5	N/A	1	996	B5 WOOD POLE BRACKET	IE B5	891	5°	V3	HAWKESBURY CITY COUNCIL (100%)
6	NEW	316952	7891	1011310	283063	ROADLED MIDI 61W 3K STANDARD VISOR	PM30G01L61	1	768	9.5m	TIMBER POLE	IEB5	N/A	1	996	B5 WOOD POLE BRACKET	IE B5	891	5°	V3	HAWKESBURY CITY COUNCIL (100%)

SAFETY IN DESIGN INFORMATION

SAFETY IN DESIGN ISSUES HAVE BEEN ASSESSED AS PART OF THE DESIGN PROCESS. ALL REASONABLE STEPS HAVE BEEN TAKEN TO ENSURE HAZARDS AND RISKS NORMALLY ASSOCIATED WITH THIS TYPE OF DESIGN HAVE BEEN MITIGATED AND/OR COMMUNICATED.
RESIDUAL HAZARDS AND RISKS AND/OR HAZARDS AND RISKS NOT NORMALLY ASSOCIATED WITH THIS TYPE OF WORK WHICH MAY REQUIRE SUBSEQUENT CONSIDERATION AND/OR ACTION ARE DESCRIBED IN -

ARP5495 - Design Safety Report

Cadastre: © Land and Property Information 2016

AMENDMENTS
A ORIGINAL ISSUE
DRAFT No. 01

TEMPLATE VERSION No.5.20

© THIS DRAWING AND THE COPYRIGHT THEREIN IS THE PROPERTY OF ENDEAVOUR ENERGY AND MAY NOT BE COPIED, REPRODUCED, DISTRIBUTED, LOANED OR USED WITHOUT THE WRITTEN CONSENT OF ENDEAVOUR ENERGY

REFERENCE DRAWING'S

WORK ORDERS
GENERAL
OVERHEAD
UNDERGROUND
SUBSTATIONS

CAMS File No.	ARP5495
AM PROJ. No.	
HV SWITCHING	
EE DEPOT	WINDSOR DEPOT
EE REGION	NORTHERN
HV OP DIAG	WINDSOR
LOCAL GOV AREA	HAWKESBURY CITY COUNCIL

ORIGINAL SCALE

DRAWN	L.D.
DATE	14/03/2025
CH'D	A.H.

DO NOT SCALE
DIMENSIONS IN METRES GDA2020 MGA56

DESIGN Z.K.

WINDSOR RD AND PITT TOWN RD INTERSECTION
McGRATHS HILLS
ARP5495
ASSET RELOCATION & STREET LIGHTING

Endeavour Energy

A1 534927 A

SHEET No 1 OF 2 SHEETS

106622